Heritage Treasures : An In-depth Analysis Of UNESCO World Heritage Sites Using Tableau

Project Report

1. Introduction :

Heritage Treasures is a data visualization project focused on analyzing global UNESCO World Heritage Sites using Tableau. The project utilizes publicly available data from UNESCO to explore the distribution, classification, geographical spread, and historical trends of World Heritage Sites across different countries and regions.

By transforming raw heritage site data into interactive dashboards and visual stories, the project enables users to gain meaningful insights through graphical representations such as maps, bar charts, pie charts, and trend analyses.

Importance :

- Helps in understanding the global distribution of World Heritage Sites recognized by UNESCO.
- Creates awareness about cultural, natural, and mixed heritage conservation.
- Identifies countries and regions with a high number of heritage sites.
- Highlights endangered heritage sites that require immediate preservation efforts.
- Analyzes historical trends in site inscriptions over the years.
- Supports tourism planning and heritage management decisions.
- Demonstrates the practical application of Tableau in real-world data analysis.
- Enhances data visualization, analytical thinking, and storytelling skills.
- Converts complex global data into easy-to-understand interactive dashboards.

Project Overview :

The project involves data collection, preprocessing, analysis, and visualization using Tableau. The dataset includes information such as country, region, category (Cultural, Natural, Mixed), year of inscription, and site status.

Purpose :

- Analyze and visualize UNESCO World Heritage Site data.
- Identify patterns and trends in heritage site recognition.
- Demonstrate the power of Tableau in data storytelling.
- Provide clear insights through interactive dashboards.
- Compare the distribution of heritage sites across countries and regions.
- Examine the proportion of sites categorized as “In Danger.”
- Study year-wise inscription growth to understand historical developments.
- Support heritage conservation awareness through data-driven insights.
- Transform raw global heritage data into meaningful visual representations.

2. Ideation Phase

Customer problem statement template :

The Customer Problem Statement template helps clearly define the challenges faced while analyzing UNESCO World Heritage Sites using Tableau. It structures the problem from the researcher's perspective by identifying who the user is, what they are trying to achieve, the barriers they face, the root causes of those barriers, and the emotional impact.

This approach ensures that the Heritage Treasures project focuses on real data challenges such as inconsistent datasets, time-consuming data preparation, and difficulty in generating insights, ultimately guiding the development of effective and meaningful Tableau visualizations.

I am	Travel enthusiasts, historians, or cultural researchers who are knowledgeable about world heritage, eager to explore global UNESCO World Heritage sites and trends using data visualization
I'm trying to	Gain insights into the historical, cultural, and geographical significance of UNESCO World Heritage sites by analyzing data trends and patterns using Tableau
but	Face challenges with understanding and interpreting large datasets of UNESCO sites, feeling overwhelmed by the volume and complexity of the information
because	The data is dispersed and complex, making it difficult to quickly identify patterns, trends, and insights without proper visualization tools and analysis methods
because	The data is dispersed and complex, making it difficult to quickly identify patterns, trends, and insights without proper visualization tools and analysis methods
which makes me feel	Frustrated and overwhelmed, feeling that I'm missing out on deeper knowledge and meaningful insights about these heritage treasures

Problem Statement (ps)	I am (Customer)	I'm trying to	But	Because	Which makes me feel
PS-1	Research Student	Analyze the global distribution and characteristics of UNESCO World Heritage Sites	The information about heritage treasures across countries and categories is vast and complex	It includes different regions, cultural backgrounds, natural landscapes, and mixed heritage classifications	Challenged
PS-2	Tourism Planner	Understand how heritage treasures are distributed worldwide and identify key trends	The insights are not presented in a clear and interactive visual format	Traditional reports do not effectively show comparisons between countries, regions, and heritage types	Confused

Brainstorm & Idea Prioritization Template :

The Brainstorm & Idea Prioritization Template is a structured framework that helps teams generate, organize, and evaluate ideas effectively. It guides members to brainstorm visualization concepts, analytical approaches, and key insights, then prioritize them using an Importance vs. Feasibility matrix. This approach ensures the team focuses on high-impact, practical solutions that deliver meaningful and actionable results.

Step-1 : Team gathering , collaboration and select the problem statement

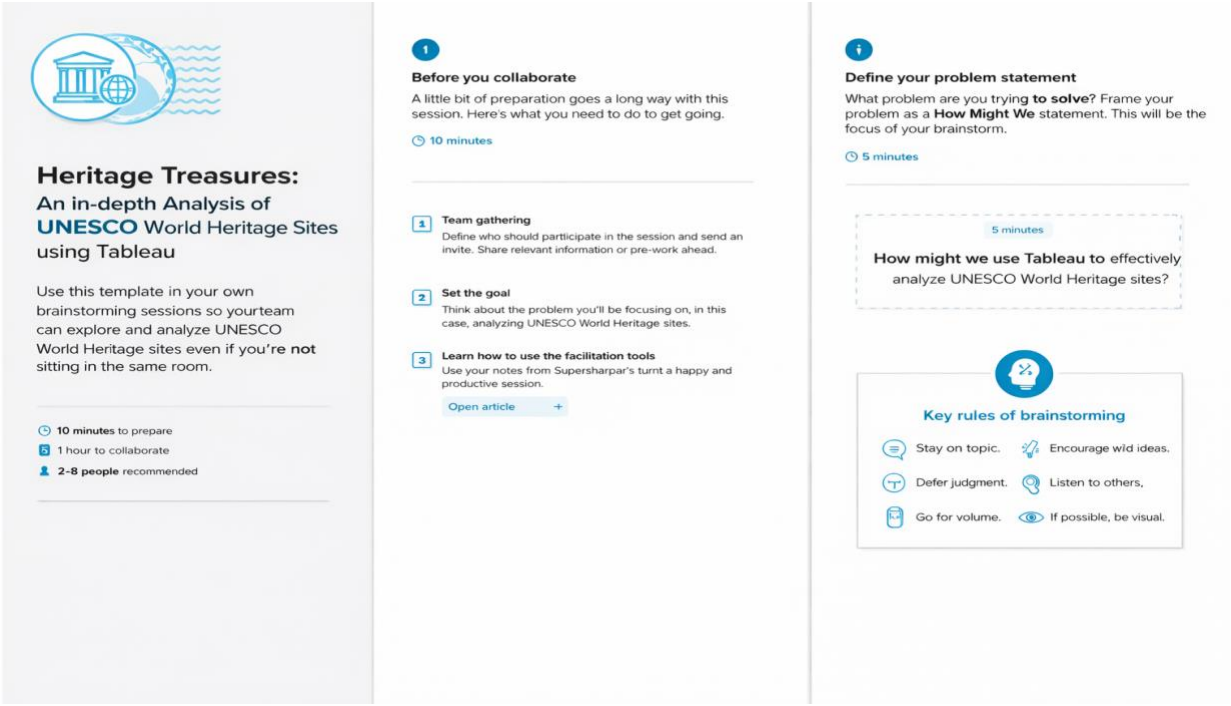

Step-2 : Brainstorm , idea listing and grouping

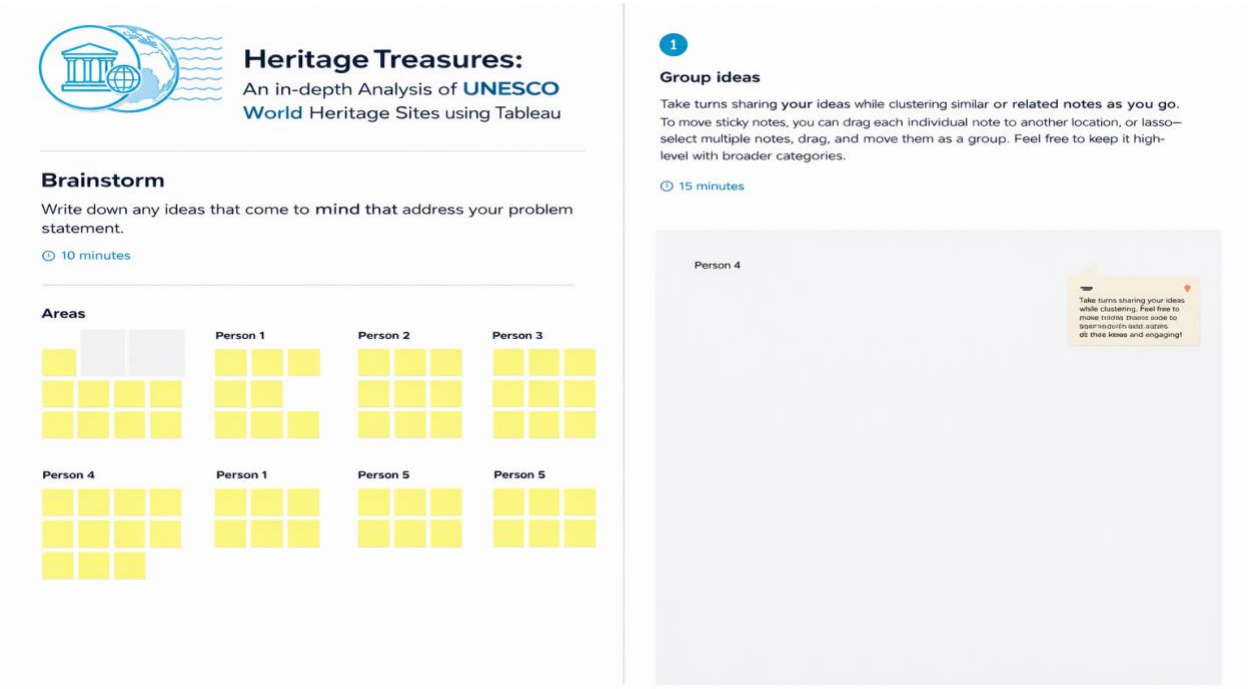

Step-3 : Idea Prioritization

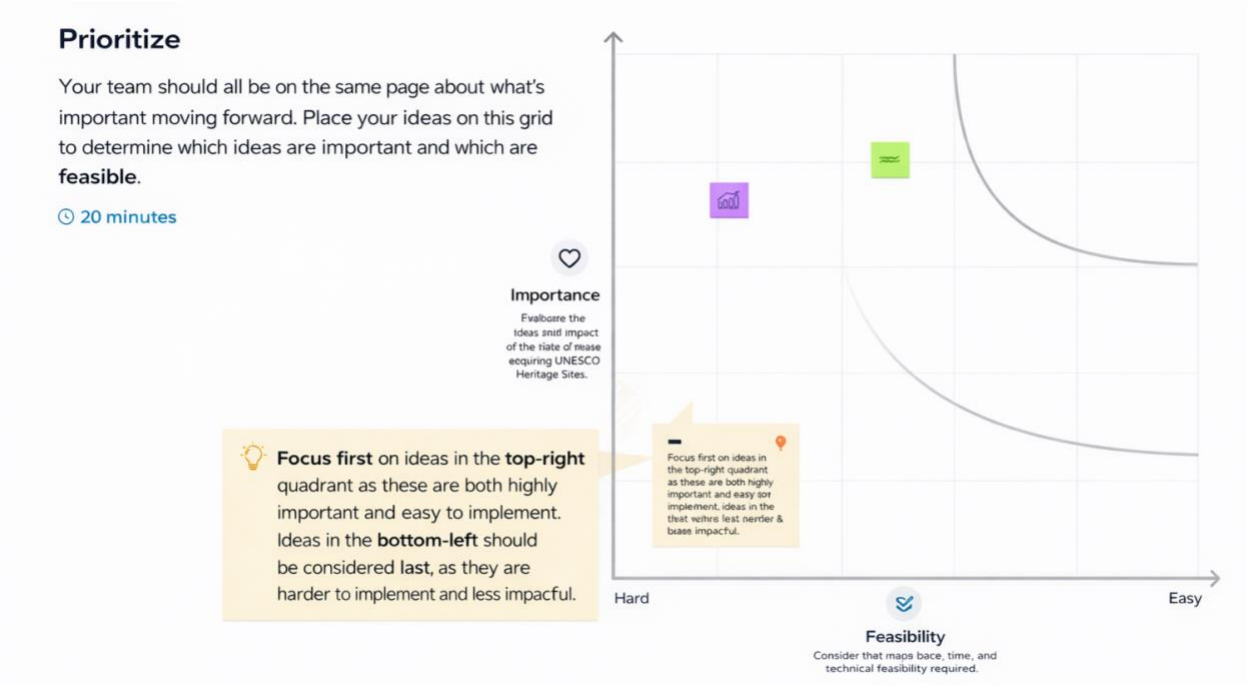

Empathy Map Canvas :

The empathy map for Heritage Treasures: An In-depth Analysis of UNESCO World Heritage Sites Using Tableau highlights how users think, feel, see, and act when exploring heritage data. It reflects their curiosity about global site distribution, concern for preservation challenges, and interest in data-driven insights. The map also identifies pain points such as data gaps and limited awareness, while emphasizing gains like clearer understanding, meaningful visual storytelling, and informed decision-making for heritage conservation.

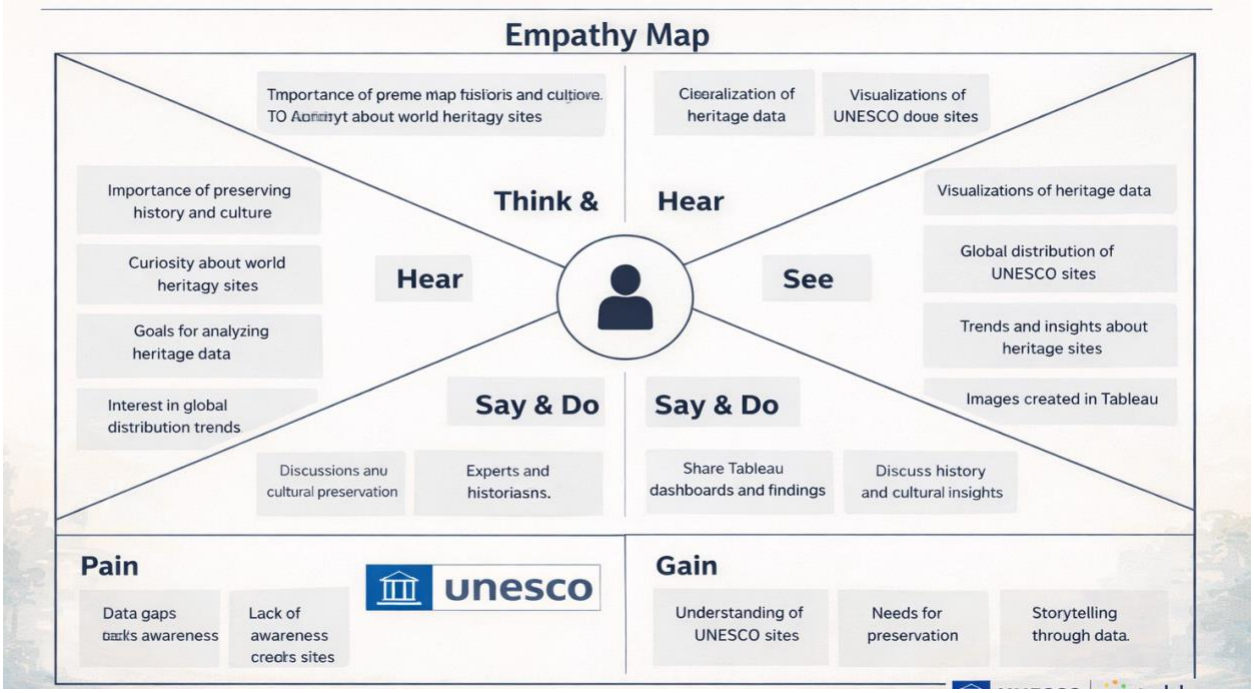
Empathy Map
Tmportance of preme map fusioris and cultiove. TO Aonnnyt about world heritagy sites
Cieeralization of heritage data
Visualizations of UNESCO doue sites
Importance of preserving history and culture
Think &
Hear
Visualizations of heritage data
Curiosity about world heritagy sites
Hear
See
Global distribution of UNESCO sites
Goals for analyzing heritage data
Trends and insights about heritage sites
Interest in global distribution trends
Say & Do
Say & Do
Images created in Tableau
Discussions anu cultural preservation
Experts and historiasns.
Share Tableau dashboards and findings
Discuss history and cultural insights
Pain
unesco
Gain
Data gaps
Lack of awareness creots sites
Understanding of UNESCO sites
Needs for preservation
Storytelling through data.

3. Requirement Analysis :

Customer journey map :

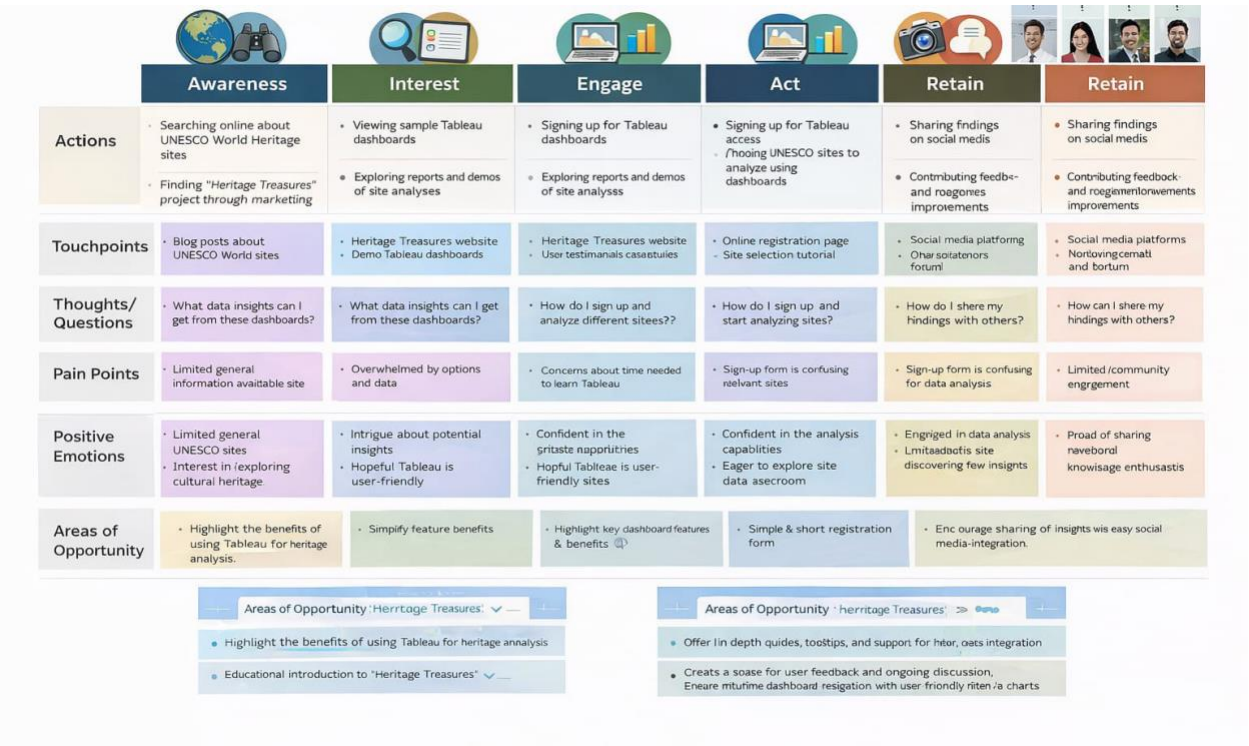

Solution Requirements :

- Functional Requirements

FR No.	**Functional Requirement (Epic)**	**Sub Requirement (Story/ Sub-Task)**
FR-1	User Registration	Registration through Form Registration through Gmail Registration through LinkedIn
FR-2	User Confirmation	Confirmation via Email verification link Confirmation via OTP (One-Time Password)
FR-3	User Login & Authentication	Login using Email & Password Login via Gmail

		Login via LinkedIn Forgot Password Reset Password
FR-4	Explore UNESCO World Heritage Sites	Browse list of UNESCO sites Search by site name Filter by Country / Continent View detailed site information
FR-5	Site Analysis & Visualization	Display site category Show year of inscription Comparative analysis of sites Graphical data representation
FR-6	Admin Management	Add / Edit / Delete site data Manage users Moderate reviews and content

- **Non - Functional Requirements**

FR No.	**Non-functional Requirement**	**Description**
NFR-1	Usability	The system should be easy to use, visually clear, and accessible across all devices (mobile, tablet, desktop).
NFR-2	Security	The system must protect user data through secure authentication, encryption, and protection against cyber threats.

NFR-3	Reliability	The system should function consistently with accurate data and minimal downtime.
NFR-4	Performance	The system should load quickly and respond efficiently to user actions.
NFR-5	Availability	The system must be accessible to users at all times with minimal service Interruption.
NFR-6	Scalability	The system should support future growth in users and data without performance issues.

Data Flow Diagram & User Stories

Data Flow Diagrams :

The data flow diagram for Heritage Treasure illustrates how heritage site data moves through the system. It begins with data collection from UNESCO sources, followed by data processing and cleaning. The processed data is then stored and visualized using Tableau to generate insights. Finally, the results are presented to stakeholders such as policymakers, researchers, and cultural enthusiasts to support informed decision-making and heritage preservation efforts.

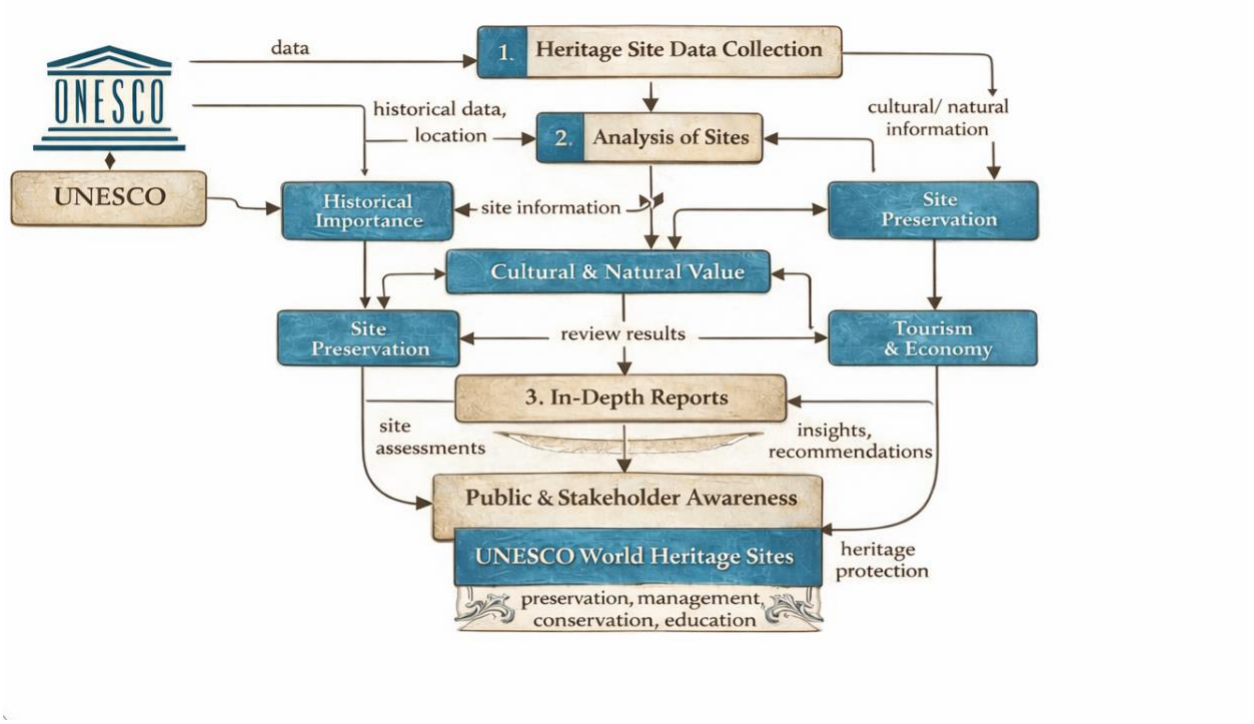

User Stories :

User Type	Functional Requirement (Epic)	User Story Number	User Story / Task	Acceptance criteria	Priority	Release
Mobile User	Registration	User -1	As a visitor, I can register using email and password so that I can access the app features.	User can create account and access dashboard.	High	Sprint-1
Mobile User	Registration	User -2	As a visitor, I receive a confirmation email after registration.	Confirmation email Is sent and verified	High	Sprint -1

				successfully.		
Mobile User	Login	User -4	As a visitor, I can login using email and password.	Valid credentials allow successful login.	High	Sprint-1
Web User	Favorites	User -12	As a web user, I can save heritage sites to my favorites list.	Site is added to favorites and visible in profile.	Medium	Sprint-2
Content Manager	Site Management	User-13	As a content manager, I can add new heritage sites.	Admin panel allows adding site details successfully.	High	Sprint-1
Content Manager	Site Management	User-14	As a content manager, I can edit or delete heritage site information.	Changes reflect immediately on platform.	High	Sprint-1
Customer Support	Booking Support	User-15	As a support executive, I can view and manage visitor bookings.	Support panel shows booking	Medium	Sprint-3

Executive				details and allows modification/cancellation.		
Administrator	User Management	User-16	As an admin, I can manage user accounts (activate/deactivate).	Admin can update user status successfully.	High	
Administrator	Reports & Analytics	User-17	As an admin, I can generate reports on bookings and revenue.	Reports can be viewed and exported (PDF/Excel).	Medium	Sprint-3
Administrator	Security	User-18	As an admin, I can manage roles and permissions.	Role-based access control is enforced correctly.	High	Sprint-2

Technology Stack :

Technical Architecture :

The technical architecture of Heritage Treasures integrates UNESCO datasets and external APIs through an ETL process for data cleaning, transformation, and storage in a structured database. Tableau connects to the processed data to generate interactive dashboards, with optional machine learning models used for advanced insights and trend analysis.

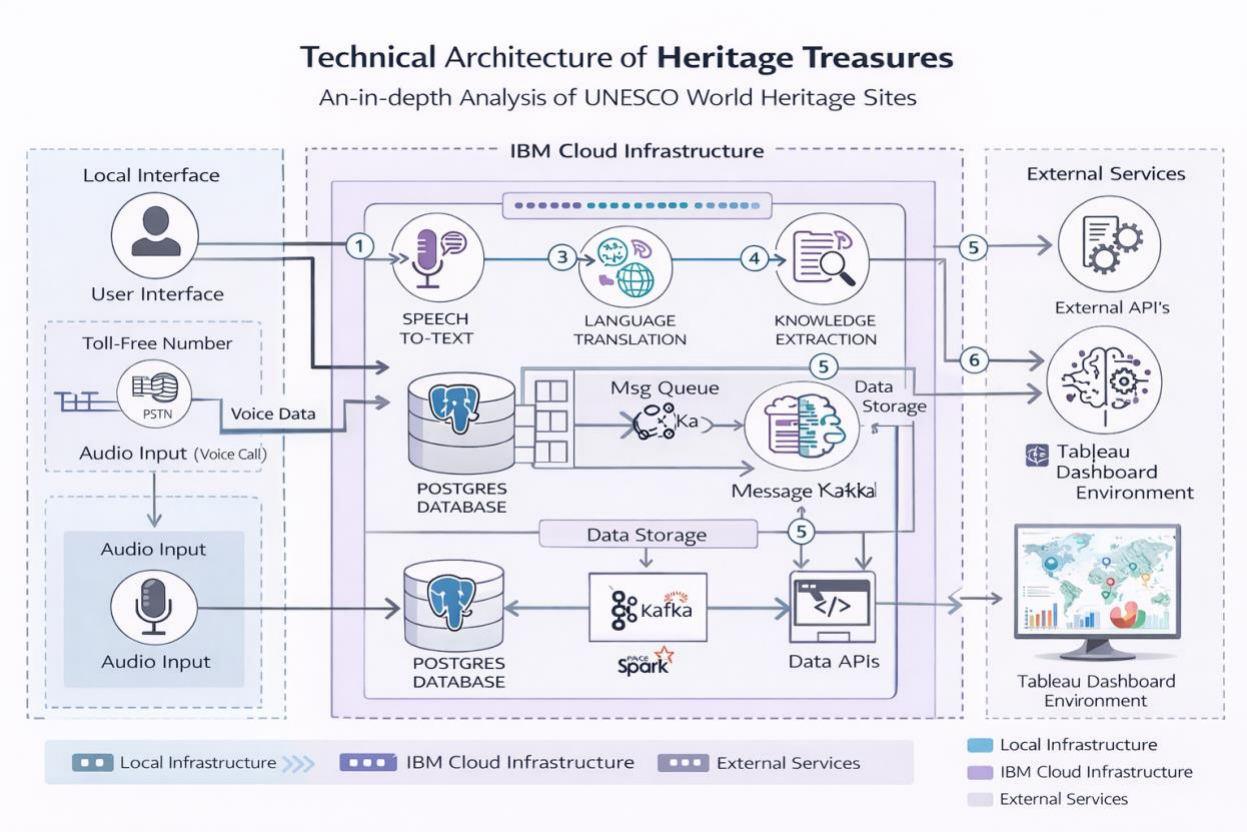

S.No	Component	Description	Technology
1	User Interface	Dashboard interface for users to explore heritage site data and Insights	Tableau Dashboard, HTML, CSS
2	Application Logic-1	Data cleaning, preprocessing, and transformation logic	Python (Pandas, NumPy)
3	Application Logic-2	Data integration and ETL process	Python, Tableau Prep
4	Application Logic-3	Data analysis and aggregation logic	SQL Queries, Python
5	Database	Structured storage of UNESCO heritage dataset	MySQL / PostgreSQL

6	Cloud Database	Cloud-based data storage for scalability and remote access	IBM DB2 / IBM Cloudar
7	File storage	Storage of raw datasets (CSV, Excel, JSON files)	Local File System / IBM Cloud Object Storage
8	External API-1	UNESCO World Heritage Site data retrieval	UNESCO Open Data API
9	External API-2	Geo-location and map visualization support	Google Maps API / OpenStreetMap API
10	Machine Learning Model	Predictive analysis (trend prediction, risk classification of endangered sites)	Scikit-learn (Regression / Classification Models)
11	Infrastructure (Server/ Cloud)	Deployment of application and dashboards	Local Server / IBM Cloud / Cloud Foundry / Kubernetes

Application Characteristics :

S. No	Characteristics	Description	Technology
1	Open-Source Framework	Frameworks used for data processing and analysis	Python, Pandas, NumPy, Scikit-learn
2	Security Implementation	Data encryption, authentication, and secure access controls	SHA-256, SSL/TLS, IAM Controls
3	Scalable Architecture	Designed using modular ETL pipeline and cloud-based storage for scaling	3-Tier Architecture, Microservices, IBM Cloud

4	Availability	Ensures high availability using cloud hosting and backup systems	Load Balancer, Distributed Cloud Servers
5	Performance	Optimized queries, caching, and efficient data visualization	SQL Indexing, Tableau Extracts, CDN

4. Project Design Phase

Problem Solution Fit :

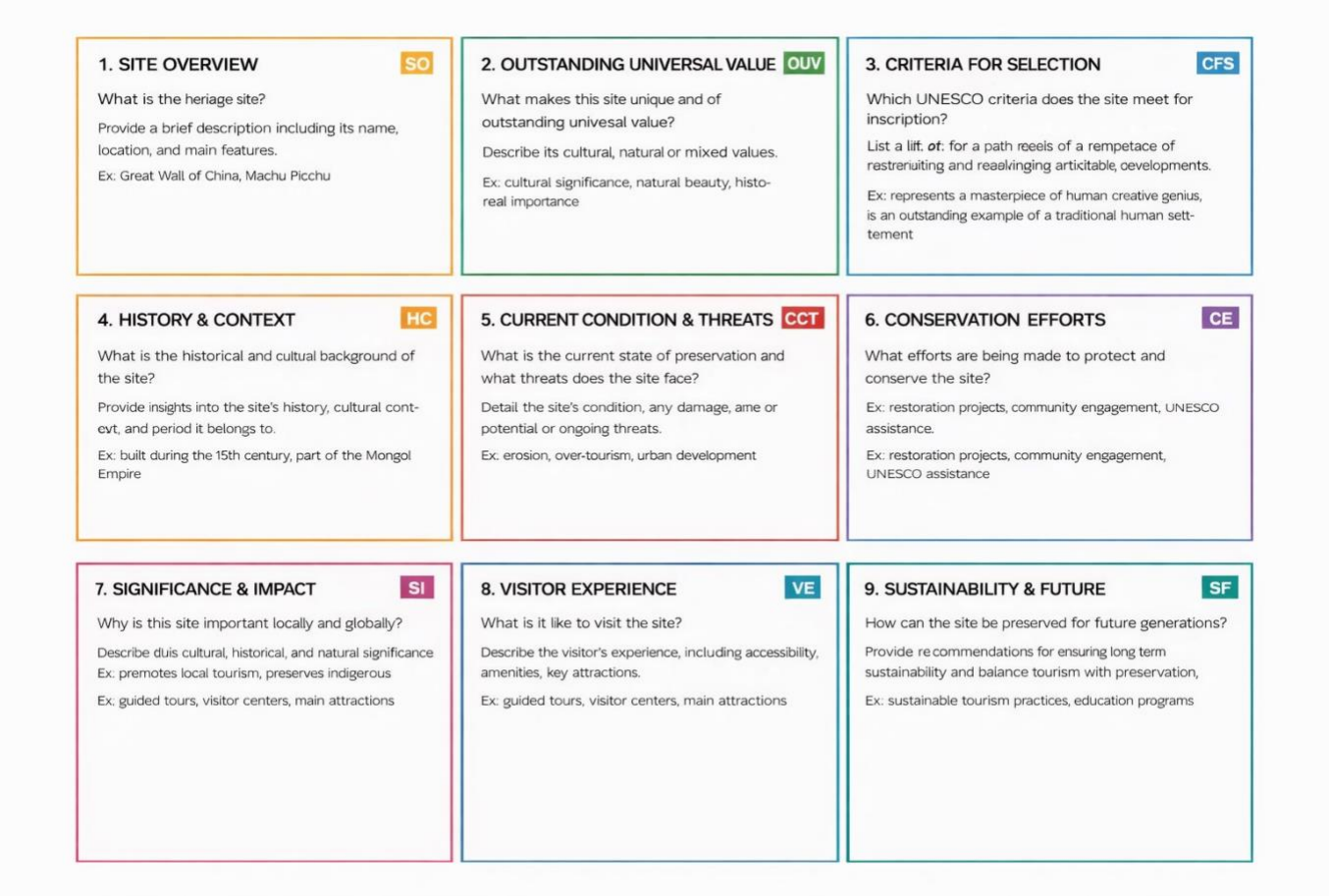

Proposed Solution :

S. No.	Parameter	Description
1.	Problem Statement (Problem to be solved)	Information about UNESCO World Heritage Sites is available in many places but not in one's simple and organized platform. Users find it difficult to compare and analyze sites easily.
2.	Idea / Solution description	Heritage Treasures is a web-based platform that provides complete information about UNESCO World Heritage Sites in

		one place. User' can search, explore, and view details about different heritage sites.
3.	Novelty / Uniqueness	The system not only provides information but also shows analysis, comparisons, and data in charts and maps, making it more interactive and educational.
4.	Social Impact / Customer Satisfaction	The platform helps people learn about world heritage, increases cultural awareness, and supports heritage conservation knowledge. It is useful for students, researchers, and travelers.
5.	Business Model (Revenue Model)	The platform can earn revenue through advertisements, premium features, and partnerships with travel agencies.
6.	Scalability of the Solution	The system can support more users and more heritage site data in the future. It can also be expanded into a mobile app or include more features later.

Solution Architecture :

Solution Architecture is a structured blueprint that defines how different technology components (services, databases, APIs, storage, analytics tools, and security mechanisms) work together to meet business and technical requirements.

- Easy Access - Users can search heritage site information using voice or mobile/web.
- Fast Processing – The system quickly handles and answers user queries.
- Scalable System – It can handle more users without slowing down.
- Organized Storage – All site data, images, and details are stored properly in the cloud.
- Data Analysis – The system analyzes information to provide useful insights.
- Security – All data is protected using encryption and secure access.

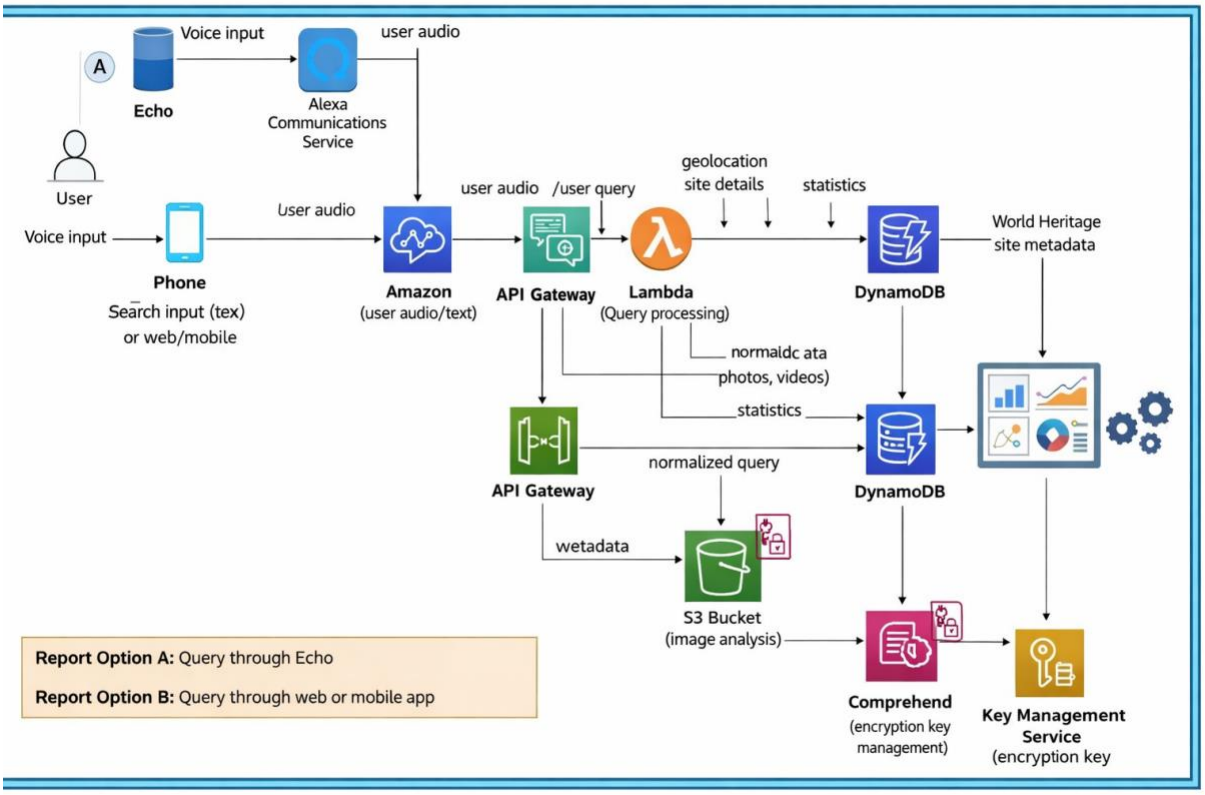
Voice input
user audio
A
Echo
Alexa
Communications
Service
User
Voice input
User audio
Phone
Search input (tex)
or web/mobile
Amazon
(user audio/text)
user audio
/user query
API Gateway
Lambda
(Query processing)
geolocation
site details
statistics
DynamoDB
World Heritage
site metadata
normaldc ata
photos, videos)
statistics
API Gateway
normalized query
DynamoDB
wetadata
S3 Bucket
(image analysis)
Comprehend
(encryption key
management)
Key Management
Service
(encryption key
Report Option A: Query through Echo
Report Option B: Query through web or mobile app

5. Project Development Phase

Initial Data Loading Steps :

- Open Tableau Public
- Connect to Data , Click “Text File” (if CSV) (or) Click “Microsoft Excel” (if Excel file)
- Browse and select your Heritage Treasures dataset file .
- Click Open.
- The dataset will appear in the Data Source page.
- Verify column names and data types.

Dataset Preprocessing Steps :

Rename columns :

- Right click on column states_ names_en , Select Rename.
- Change states_ names_en → states.
- Rename Regions_en → Regions.
- Rename Justification_en → Justification

Hide Unnecessary Fields :

- Right-click on “Red bis” and select Hide.
- Right-click on “Justification” and select Hide.
- These fields were hidden as they were not required for analysis.

Assign Geographic Roles :

- Click on the dropdown of States.
- Select Geographic Role → Country/Region.
- Similarly, assign Geographic Role → Country/Region to Regions.

Modify Data Type :

- Change the data type of “Date end” to Date. Ensure the correct date format is applied.

Visualizations :

1. Top 10 regions by area

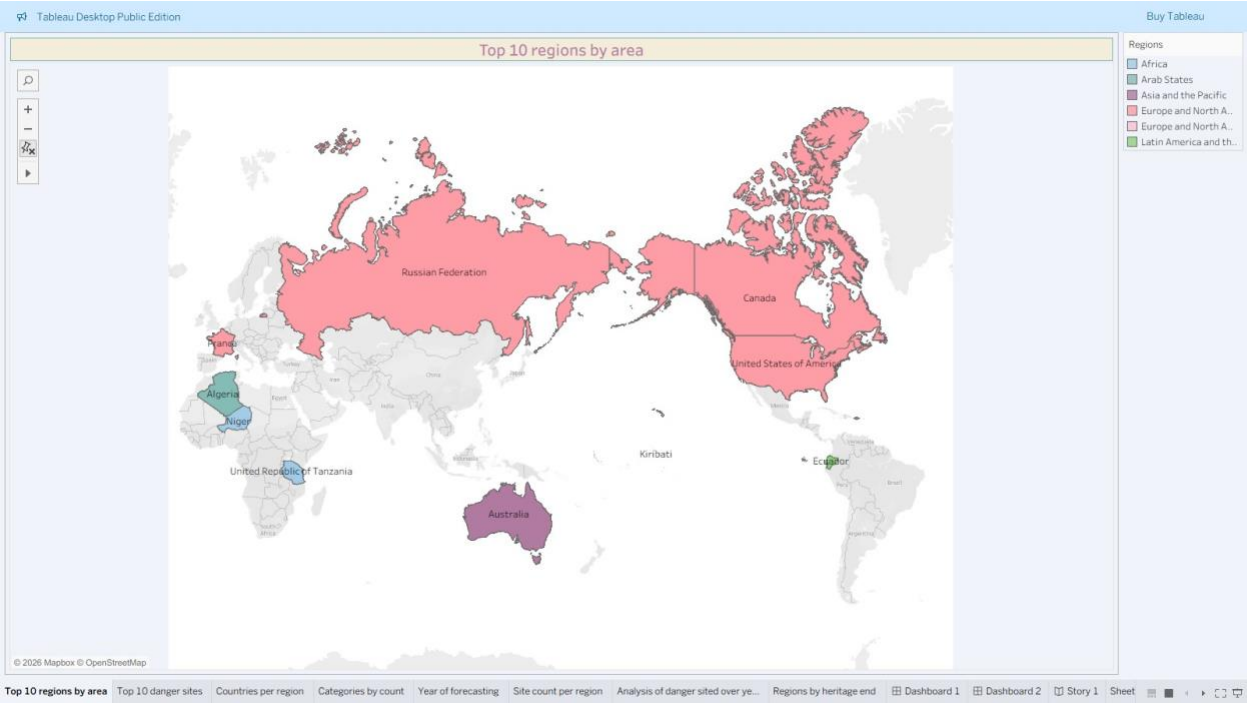

2. Countries per region

3. Regions by heritage ended

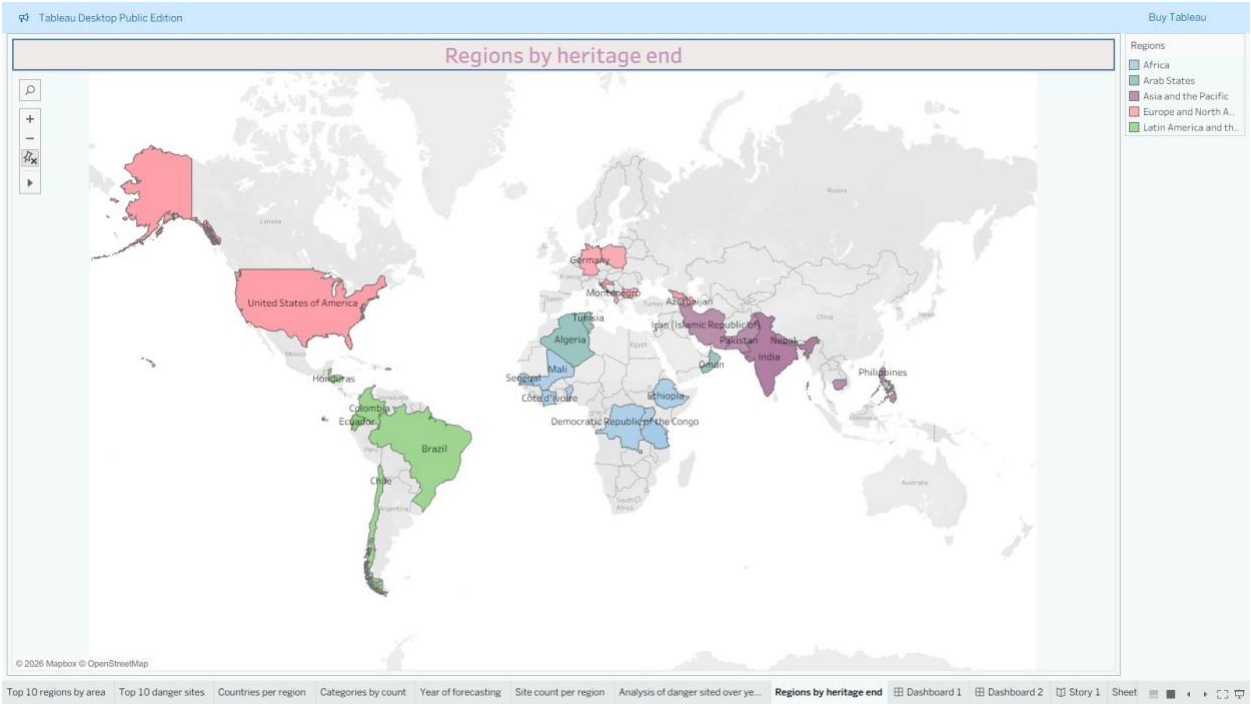

4. Top 10 danger sites

5. Year forecasting of heritages

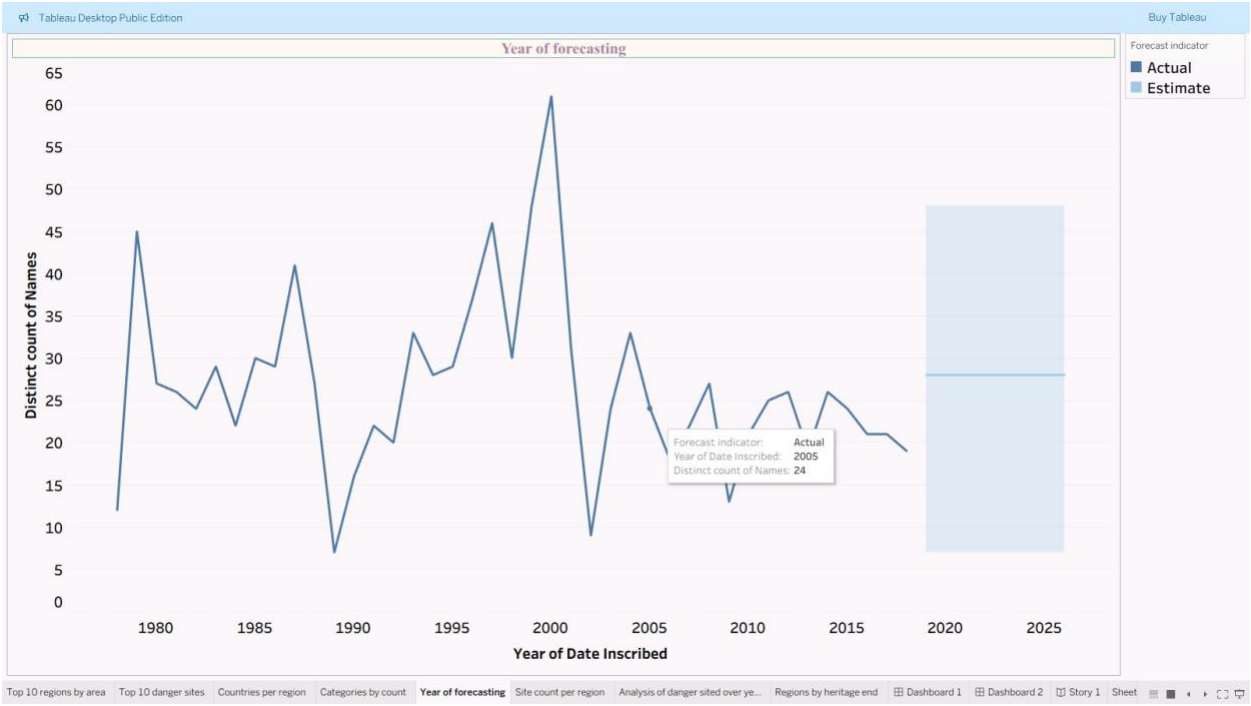

6. Categories by sites count

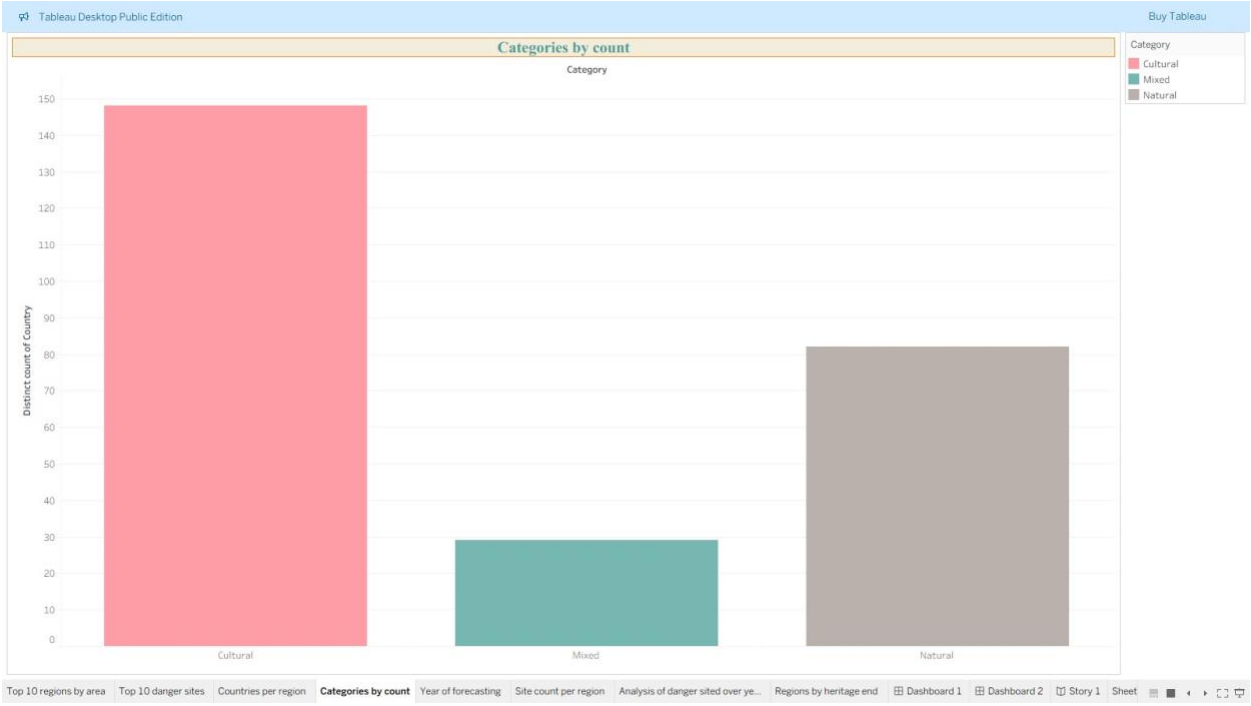

7. Site count per region

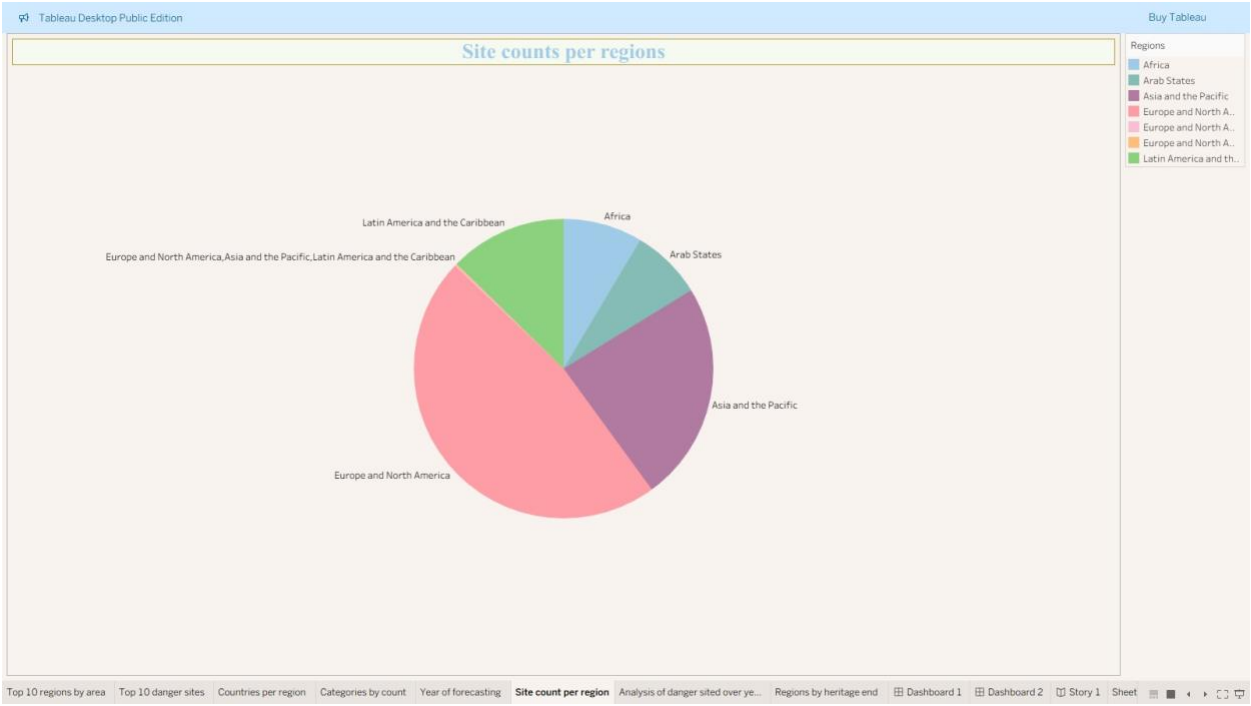

8. Analysis of danger sites

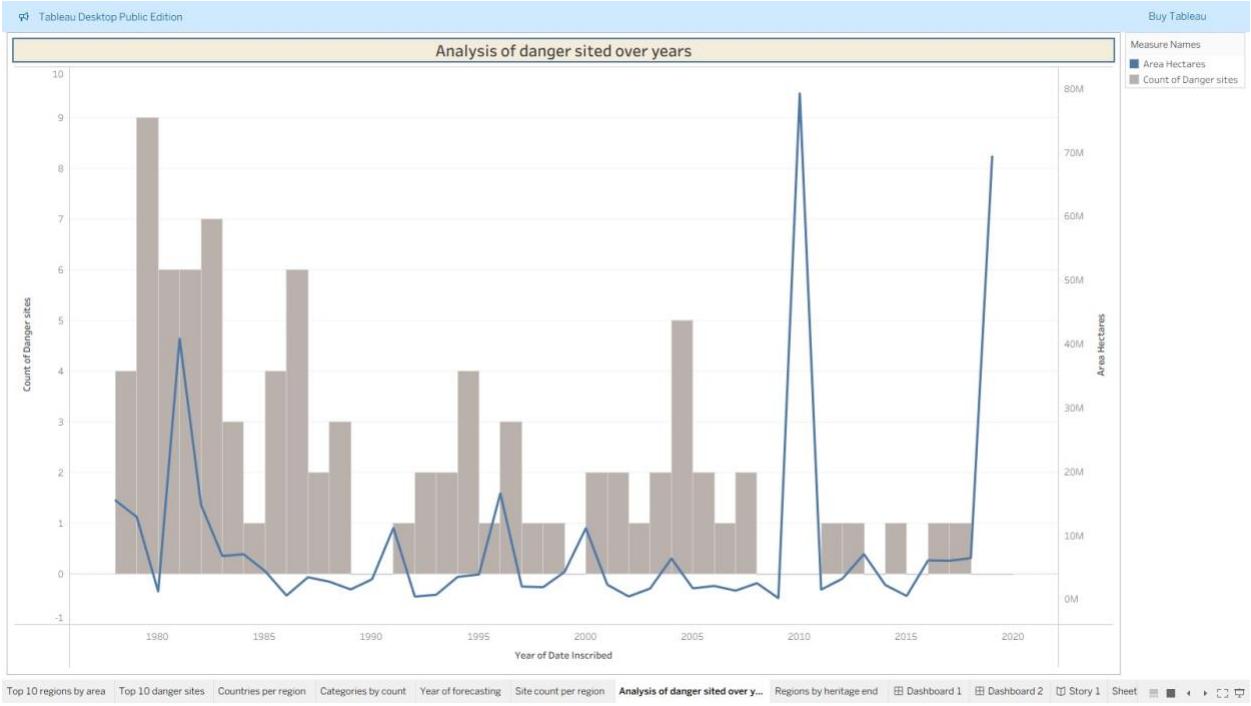

Dashboard & Story :

Dashboard : A dashboard is a single screen that displays multiple visualizations together to monitor and analyze data at a glance.

Dashboard -1 :

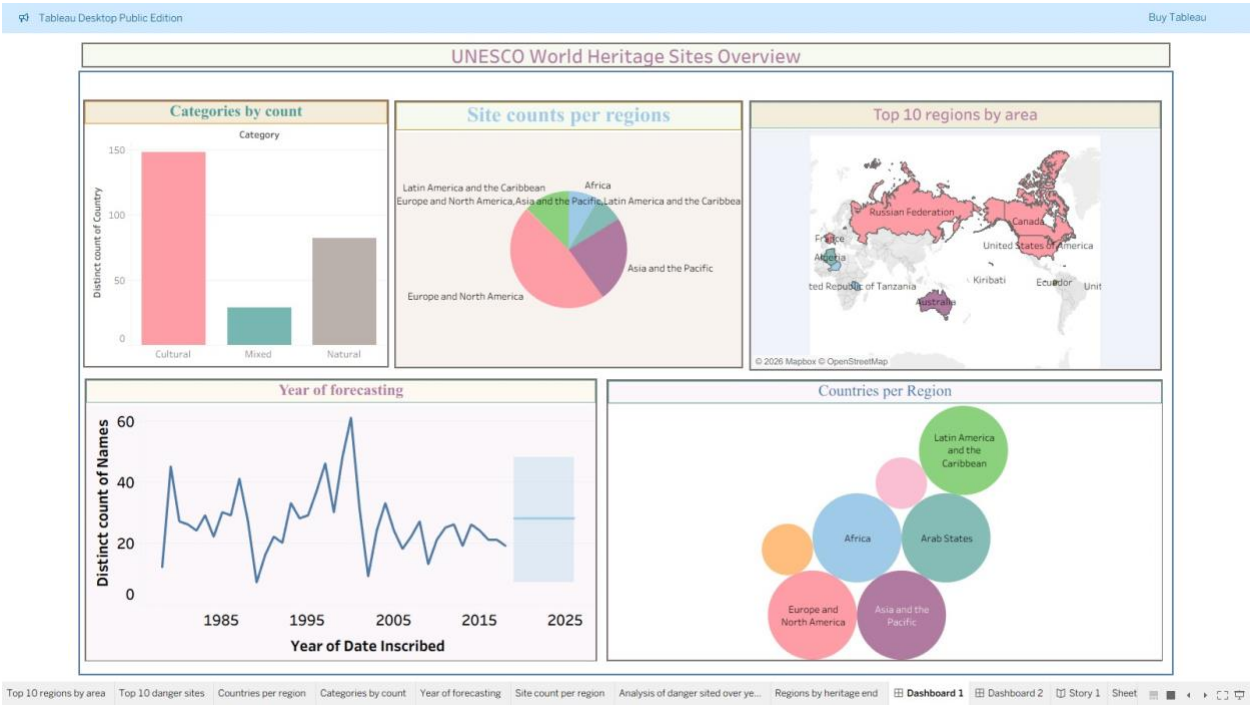

Dashboard-2 :

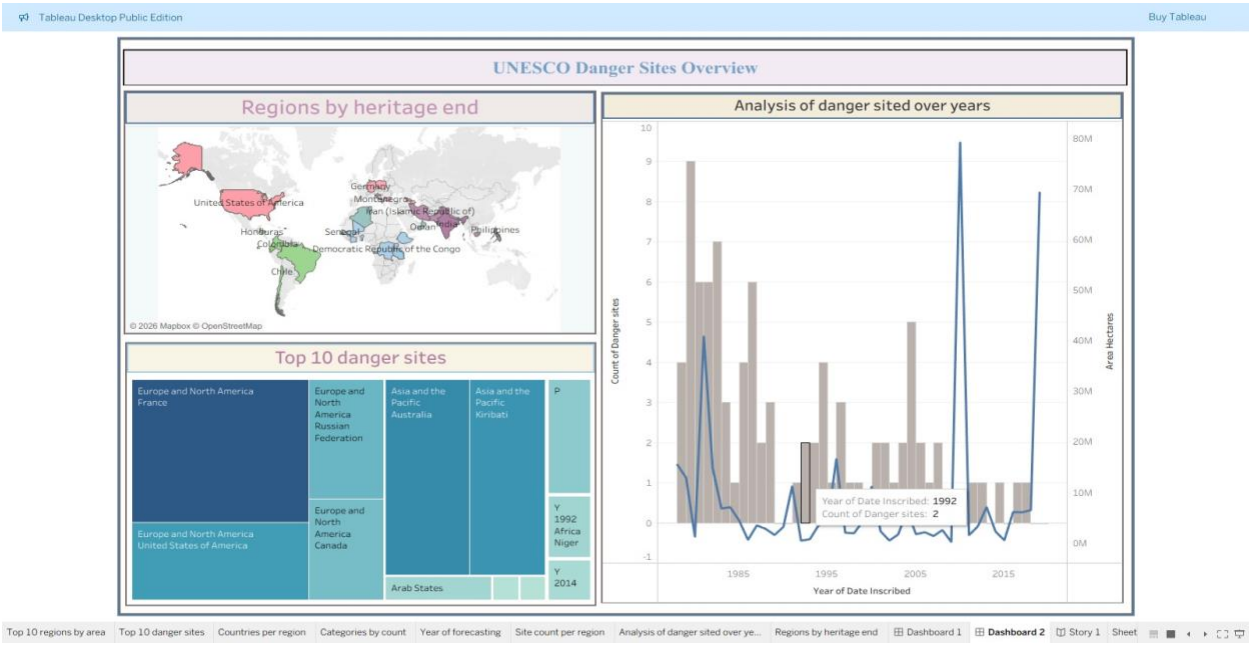

Story : A story is a sequence of related visualizations arranged in a logical order to explain data insights step by step.

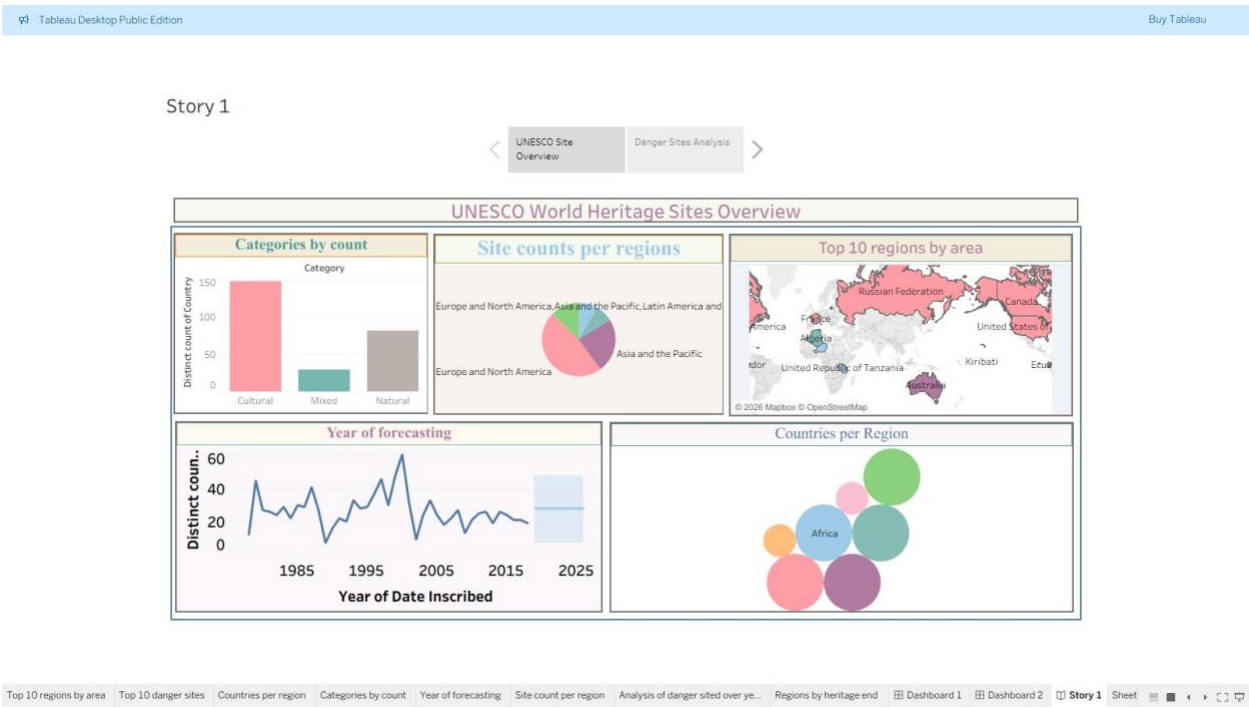

6. Project Development Phase

Performance Testing

S. No.	Parameter	Description
1	Data Rendered	Visualizes country-wise, region-wise, category-wise, and year-wise distribution of UNESCO World ”erit’ge Sites using charts and maps.
2	Data Preprocessing	Includes cleaning data, renaming fields, removing null values, correcting data types, and organizing country and region classifications.
3	Utilization Of Filters	Uses filters like Country, Region, Category, and Year to enable interactive and focused analysis.
4	Calculations fields used	Created fields for total sites, percentage contribution, and year-wise growth analysis.
5	Dashboard design	Clean and structured layout with clear titles, consistent colors, and well-arranged visualizations. No of dashboard: 2
6	Story Design	Presents insights step-by-step from global overview to detailed regional and category analysis. No of story : 1

7. Results

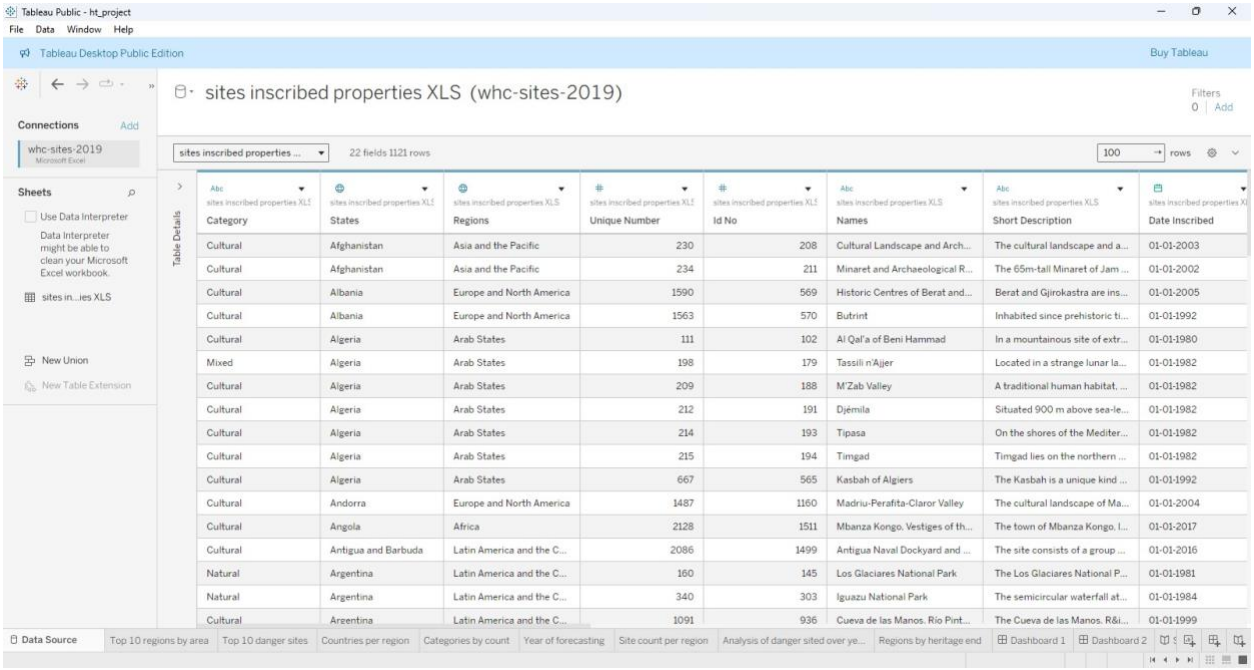

Category	States	Regions	Unique Number	Id No	Names	Short Description	Date Inscribed
Cultural	Afghanistan	Asia and the Pacific	230	208	Cultural Landscape and Arch...	The cultural landscape and a...	01-01-2003
Cultural	Afghanistan	Asia and the Pacific	234	211	Minaret and Archaeological R...	The 65m-tall Minaret of Jam ...	01-01-2002
Cultural	Albania	Europe and North America	1590	569	Historic Centres of Berat and...	Berat and Gjirokastra are ins...	01-01-2005
Cultural	Albania	Europe and North America	1563	570	Butrint	Inhabited since prehistoric ti...	01-01-1992
Cultural	Algeria	Arab States	111	102	Al Qal'a of Beni Hammad	In a mountainous site of extr...	01-01-1980
Mixed	Algeria	Arab States	198	179	Tassili n'Ajjer	Located in a strange lunar la...	01-01-1982
Cultural	Algeria	Arab States	209	188	M'Zab Valley	A traditional human habitat, ...	01-01-1982
Cultural	Algeria	Arab States	212	191	Djémila	Situated 900 m above sea-le...	01-01-1982
Cultural	Algeria	Arab States	214	193	Tipasa	On the shores of the Mediter...	01-01-1982
Cultural	Algeria	Arab States	215	194	Timgad	Timgad lies on the northern ...	01-01-1982
Cultural	Algeria	Arab States	667	565	Kasbah of Algiers	The Kasbah is a unique kind ...	01-01-1992
Cultural	Andorra	Europe and North America	1487	1160	Madriu-Perafita-Claror Valley	The cultural landscape of Ma...	01-01-2004
Cultural	Angola	Africa	2128	1511	Mbanza Kongo, Vestiges of th...	The town of Mbanza Kongo, I...	01-01-2017
Cultural	Antigua and Barbuda	Latin America and the C...	2086	1499	Antigua Naval Dockyard and ...	The site consists of a group ...	01-01-2016
Natural	Argentina	Latin America and the C...	160	145	Los Glaciares National Park	The Los Glaciares National P...	01-01-1981
Natural	Argentina	Latin America and the C...	340	303	Iguazu National Park	The semicircular waterfall at...	01-01-1984
Cultural	Argentina	Latin America and the C...	1091	936	Cueva de las Manos, Río Pint...	The Cueva de las Manos, Río...	01-01-1999

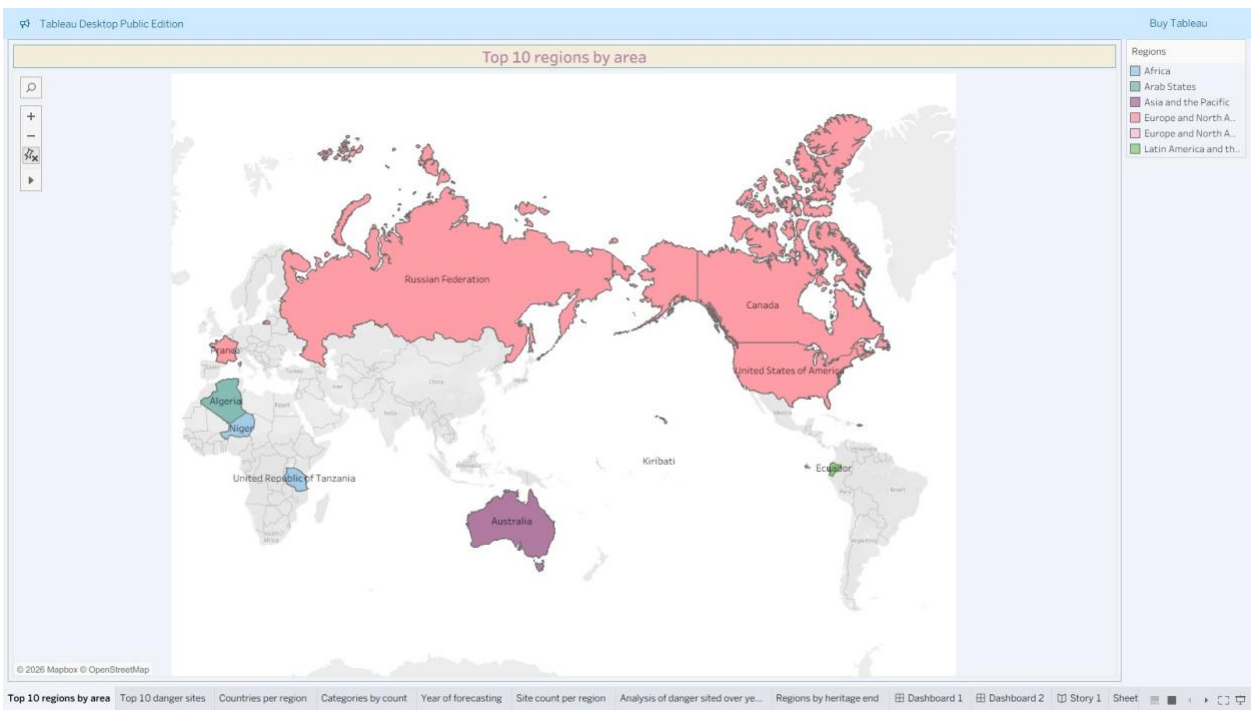

Tableau Desktop Public Edition
Buy Tableau
Countries per Region
Regions
Africa
Arab States
Asia and the Pacific
Europe and North A..
Europe and North A..
Europe and North A..
Latin America and th..
Latin America and the Caribbean
Europe and North America,Asia and the Pacific
Africa
Arab States
Europe and North America,Asia and the Pacific,Latin America and the Caribbean
Europe and North America
Asia and the Pacific
Top 10 regions by area
Top 10 danger sites
Countries per region
Categories by count
Year of forecasting
Site count per region
Analysis of danger sited over ye...
Regions by heritage end
Dashboard 1
Dashboard 2
Story 1
Sheet

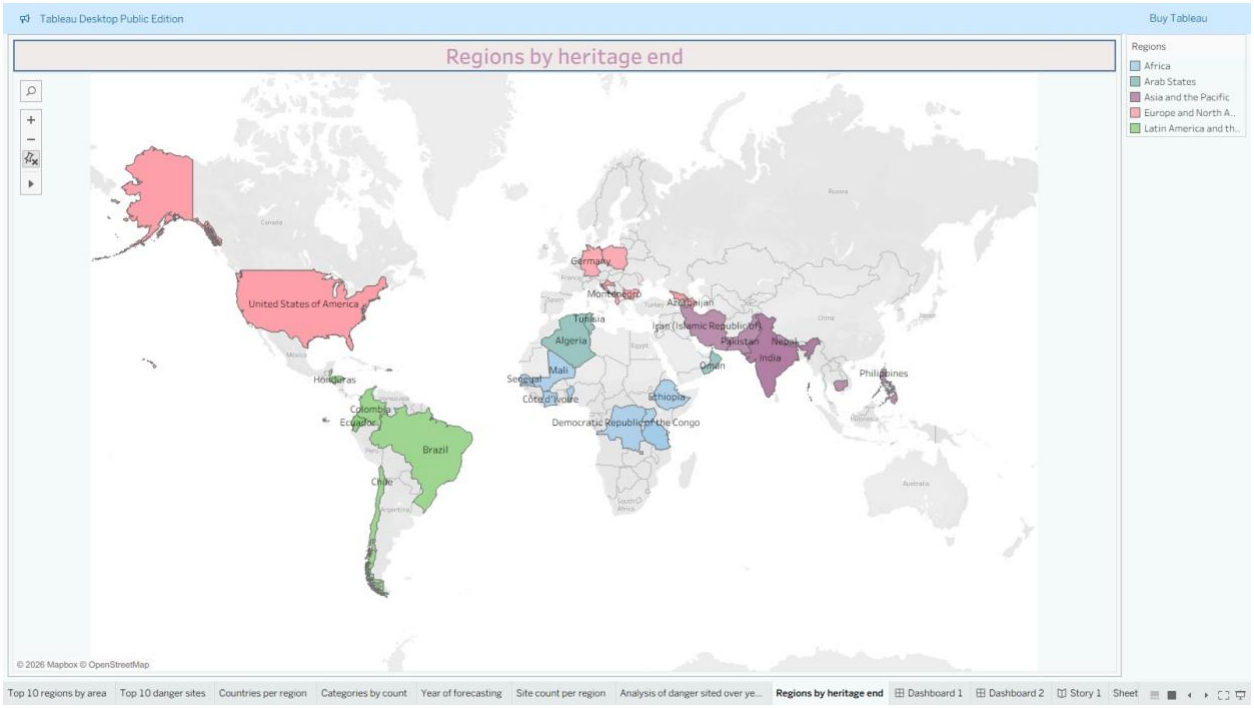
Tableau Desktop Public Edition
Buy Tableau
Regions by heritage end
Regions
Africa
Arab States
Asia and the Pacific
Europe and North A..
Latin America and th..
United States of America
Germany
Montenegro
Azerbaijan
Tunisia
Algeria
Mali
Senegal
Côte d'Ivoire
Ethiopia
Democratic Republic of the Congo
Oman
Pakistan
Nepal
India
Philippines
Honduras
Colombia
Ecuador
Brazil
Chile
© 2026 Mapbox © OpenStreetMap
Top 10 regions by area
Top 10 danger sites
Countries per region
Categories by count
Year of forecasting
Site count per region
Analysis of danger sited over ye...
Regions by heritage end
Dashboard 1
Dashboard 2
Story 1
Sheet

Tableau Desktop Public Edition
Buy Tableau
Top 10 danger sites
SUM(Area Hectares)
78
69,473,756
Europe and North America
France
Europe and North America
Russian Federation
Asia and the Pacific
Australia
Asia and the Pacific
Kiribati
P 2007-2010
Latin America and the Caribbean
Ecuador
Danger sites:
Regions: Asia and the Pacific
Country: Kiribati
Area Hectares: 40,825,000
Europe and North America
Canada
Y 1992
Africa
Niger
Europe and North America
United States of America
Y 2014
Africa
United Republic of Tanzania
Arab States
Algeria
Europe and North
Africa
United Republic
Top 10 regions by area
Top 10 danger sites
Countries per region
Categories by count
Year of forecasting
Site count per region
Analysis of danger sited over ye...
Regions by heritage end
Dashboard 1
Dashboard 2
Story 1
Sheet

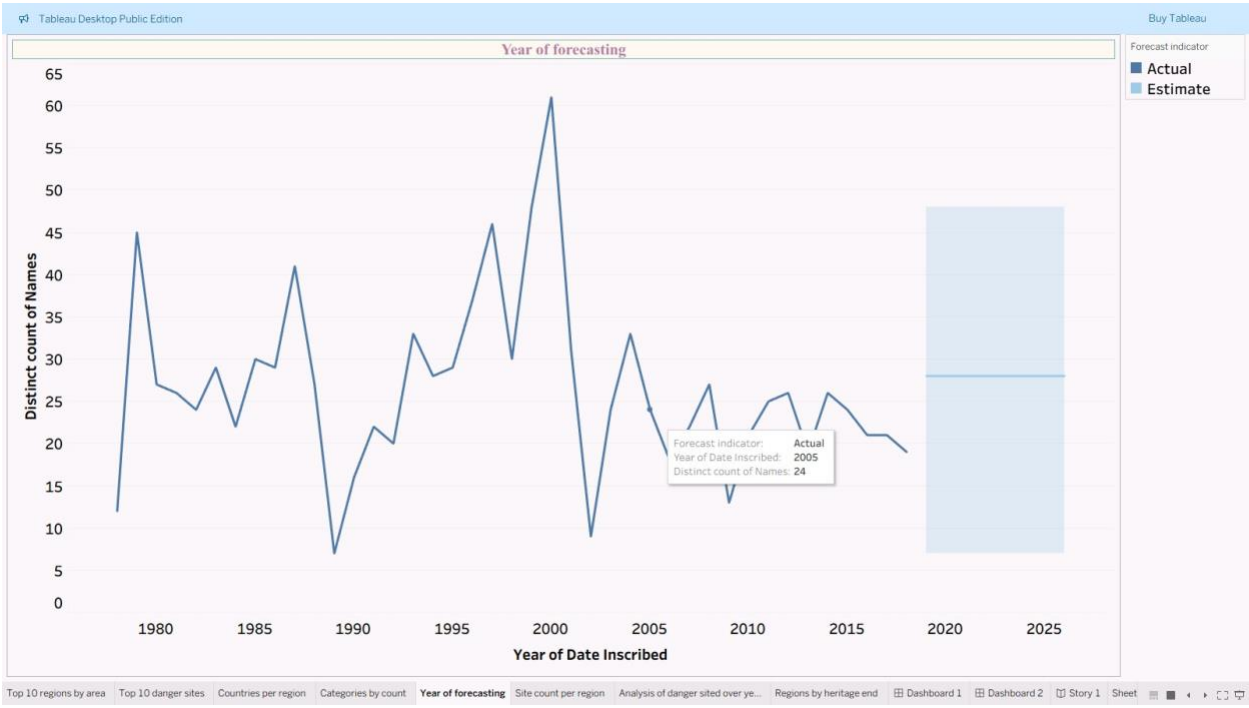
Tableau Desktop Public Edition
Buy Tableau
Year of forecasting
Forecast indicator
Actual
Estimate
Distinct count of Names
65
60
55
50
45
40
35
30
25
20
15
10
5
0
1980
1985
1990
1995
2000
2005
2010
2015
2020
2025
Year of Date Inscribed
Forecast indicator: Actual
Year of Date Inscribed: 2005
Distinct count of Names: 24
Top 10 regions by area
Top 10 danger sites
Countries per region
Categories by count
Year of forecasting
Site count per region
Analysis of danger sited over ye...
Regions by heritage end
Dashboard 1
Dashboard 2
Story 1
Sheet

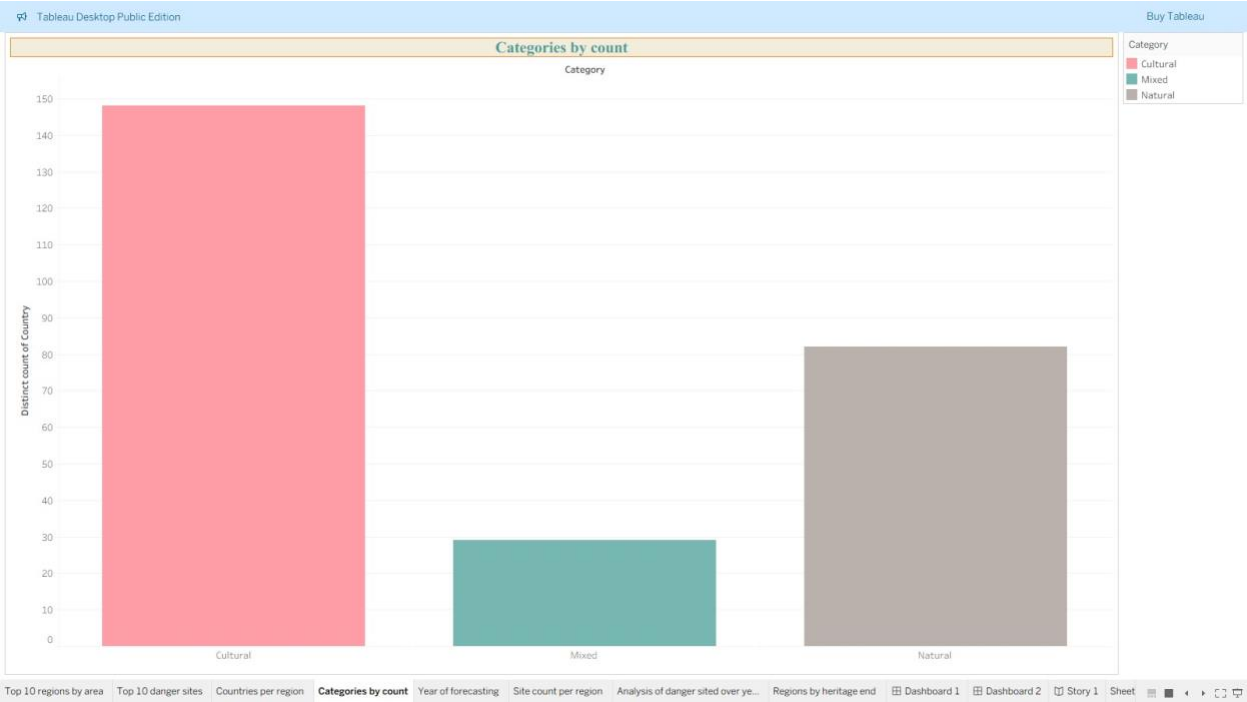
Tableau Desktop Public Edition
Buy Tableau
Categories by count
Category
Distinct count of Country
150
140
130
120
110
100
90
80
70
60
50
40
30
20
10
0
Cultural
Mixed
Natural
Category
Cultural
Mixed
Natural
Top 10 regions by area
Top 10 danger sites
Countries per region
Categories by count
Year of forecasting
Site count per region
Analysis of danger sited over ye...
Regions by heritage end
Dashboard 1
Dashboard 2
Story 1
Sheet

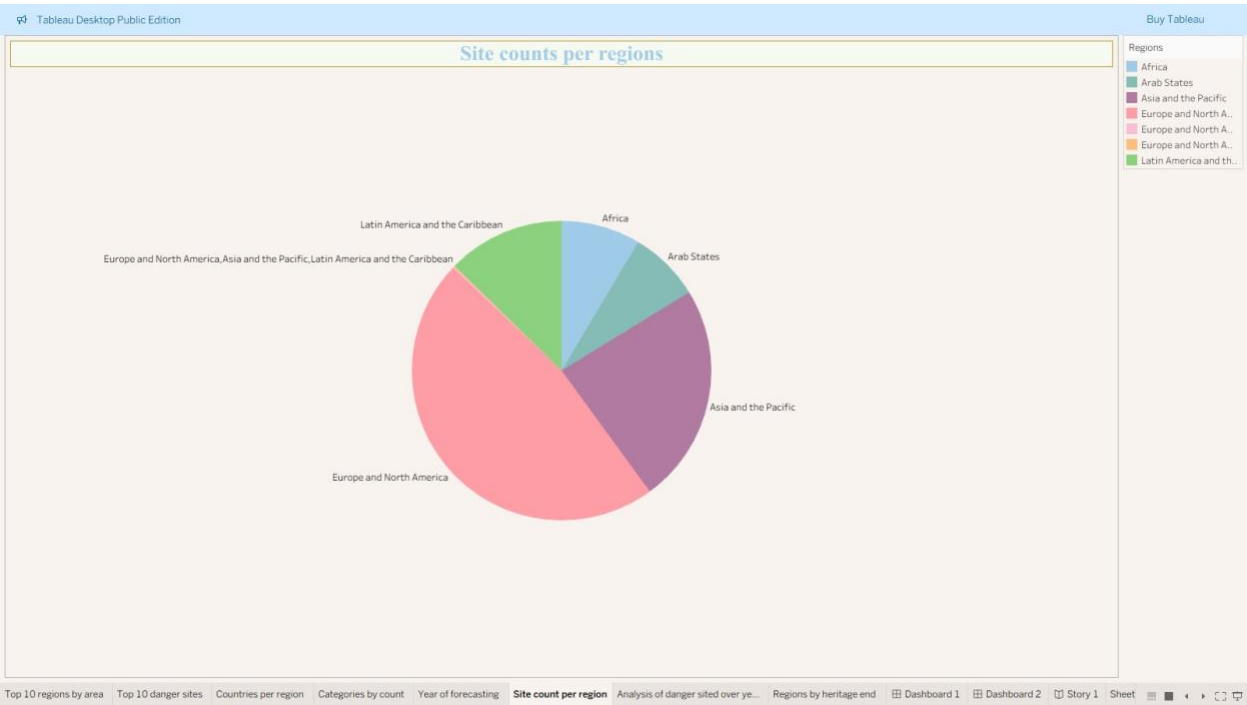
Tableau Desktop Public Edition
Buy Tableau
Site counts per regions
Latin America and the Caribbean
Europe and North America,Asia and the Pacific,Latin America and the Caribbean
Africa
Arab States
Asia and the Pacific
Europe and North America
Regions
Africa
Arab States
Asia and the Pacific
Europe and North A..
Europe and North A..
Europe and North A..
Latin America and th..
Top 10 regions by area
Top 10 danger sites
Countries per region
Categories by count
Year of forecasting
Site count per region
Analysis of danger sited over ye...
Regions by heritage end
Dashboard 1
Dashboard 2
Story 1
Sheet

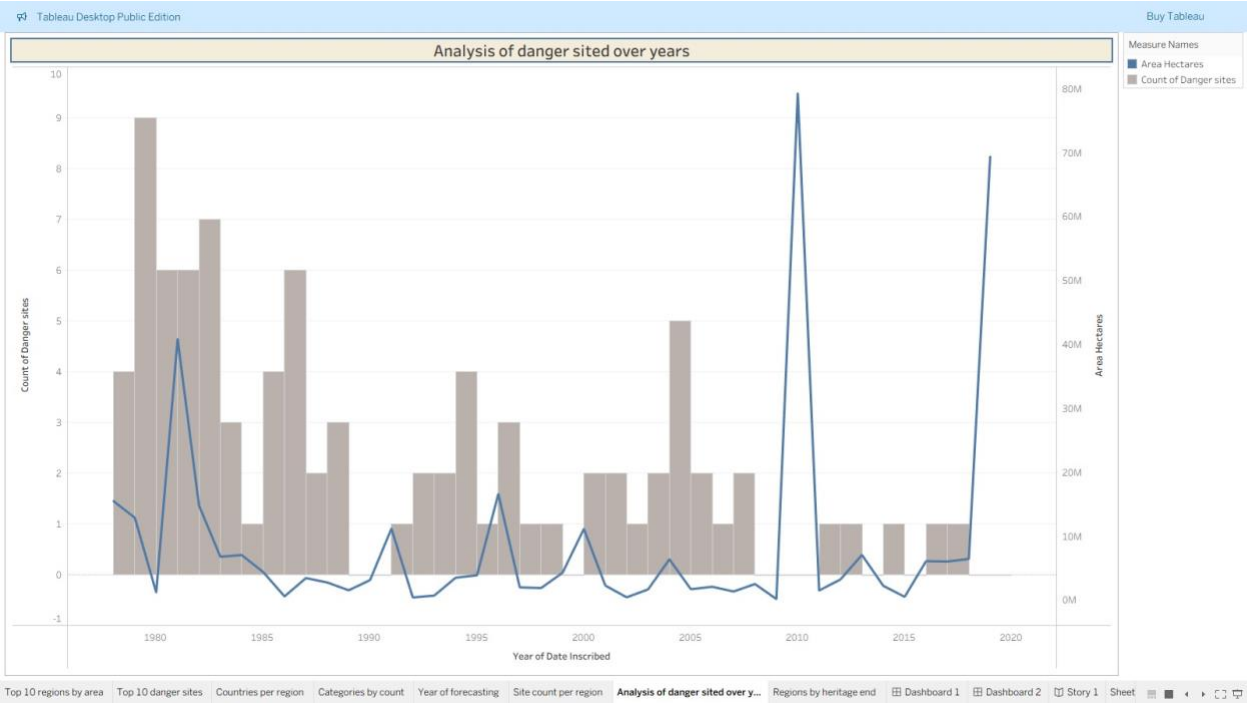
Tableau Desktop Public Edition
Buy Tableau
Analysis of danger sited over years
Measure Names
Area Hectares
Count of Danger sites
Count of Danger sites
Area Hectares
Year of Date Inscribed
Top 10 regions by area
Top 10 danger sites
Countries per region
Categories by count
Year of forecasting
Site count per region
Analysis of danger sited over y...
Regions by heritage end
Dashboard 1
Dashboard 2
Story 1
Sheet

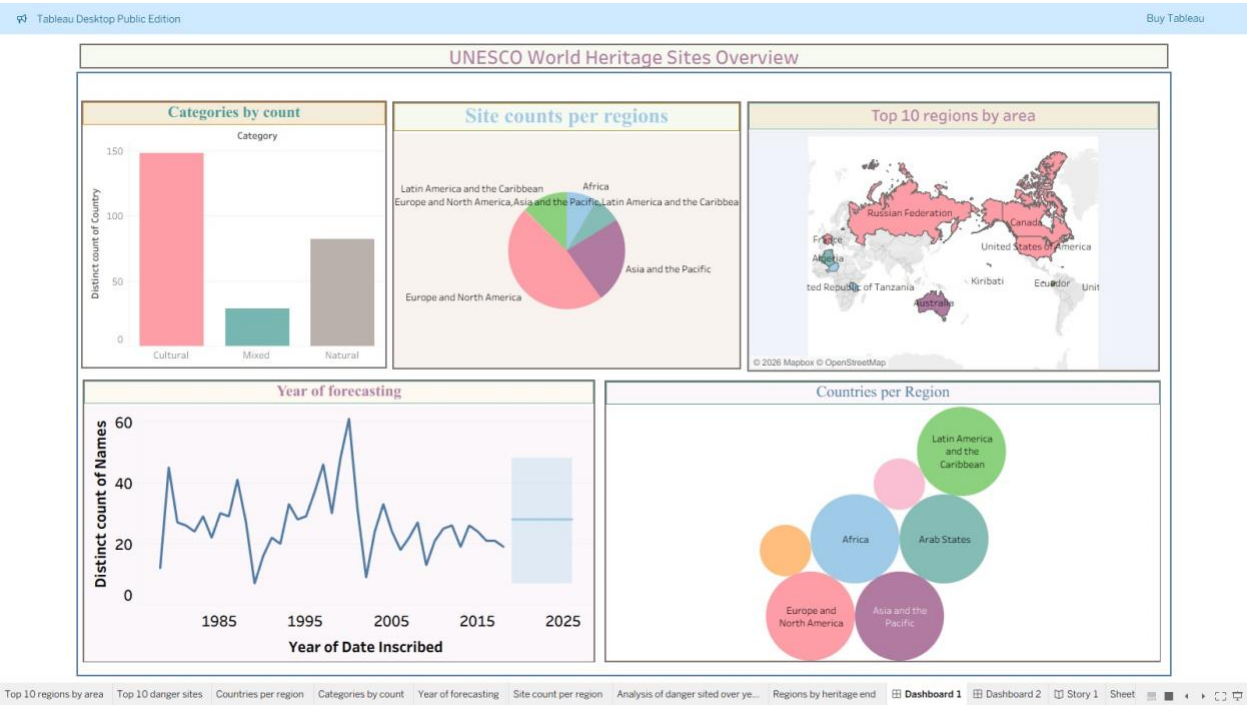
Tableau Desktop Public Edition
Buy Tableau
UNESCO World Heritage Sites Overview
Categories by count
Category
Distinct count of Country
Cultural
Mixed
Natural
Site counts per regions
Latin America and the Caribbean
Africa
Europe and North America
Asia and the Pacific
Top 10 regions by area
Russian Federation
Canada
United States of America
Kiribati
Ecuador
© 2026 Mapbox © OpenStreetMap
Year of forecasting
Distinct count of Names
Year of Date Inscribed
Countries per Region
Latin America and the Caribbean
Africa
Arab States
Europe and North America
Asia and the Pacific
Top 10 regions by area
Top 10 danger sites
Countries per region
Categories by count
Year of forecasting
Site count per region
Analysis of danger sited over ye...
Regions by heritage end
Dashboard 1
Dashboard 2
Story 1
Sheet

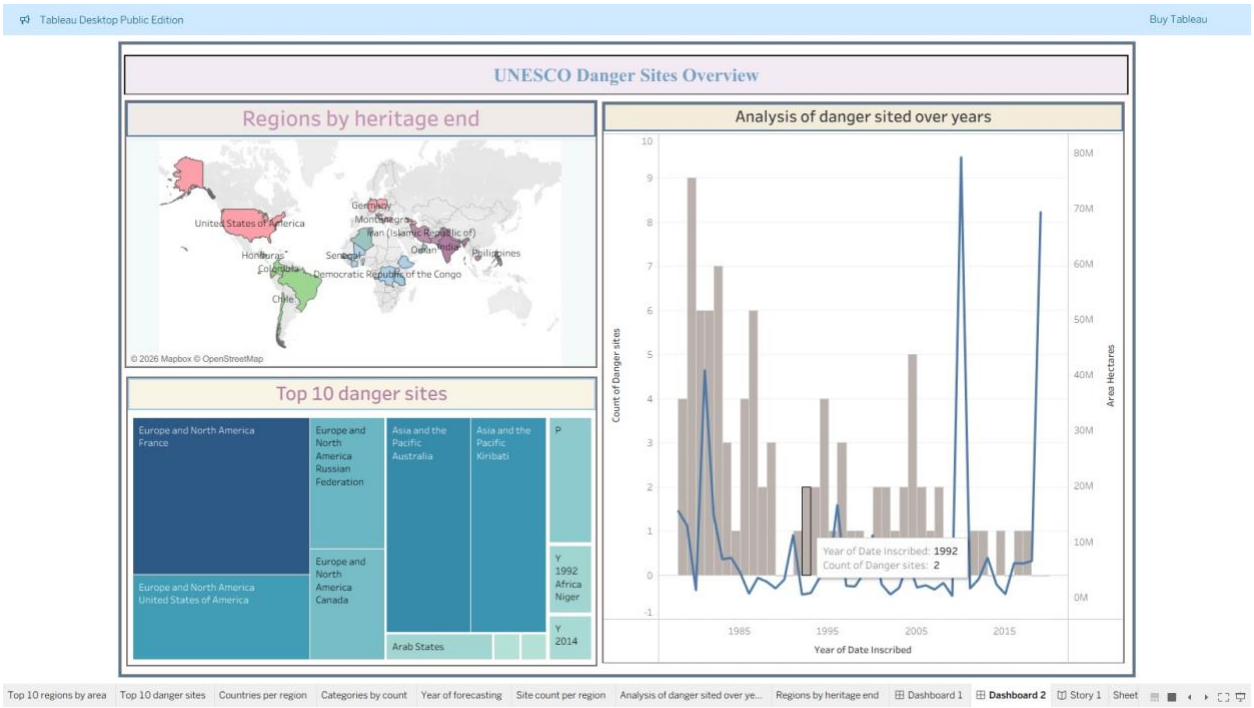
Tableau Desktop Public Edition
Buy Tableau
UNESCO Danger Sites Overview
Regions by heritage end
United States of America
Honduras
Colombia
Chile
Senegal
Germany
Montenegro
Iran (Islamic Republic of)
Oman
Philippines
Democratic Republic of the Congo
© 2026 Mapbox © OpenStreetMap
Analysis of danger sited over years
Count of Danger sites
Area Hectares
Year of Date Inscribed: 1992
Count of Danger sites: 2
Year of Date Inscribed
Top 10 danger sites
Europe and North America France
Europe and North America United States of America
Europe and North America Russian Federation
Europe and North America Canada
Asia and the Pacific Australia
Asia and the Pacific Kiribati
Arab States
Y 1992 Africa Niger
Y 2014
Top 10 regions by area
Top 10 danger sites
Countries per region
Categories by count
Year of forecasting
Site count per region
Analysis of danger sited over ye...
Regions by heritage end
Dashboard 1
Dashboard 2
Story 1
Sheet

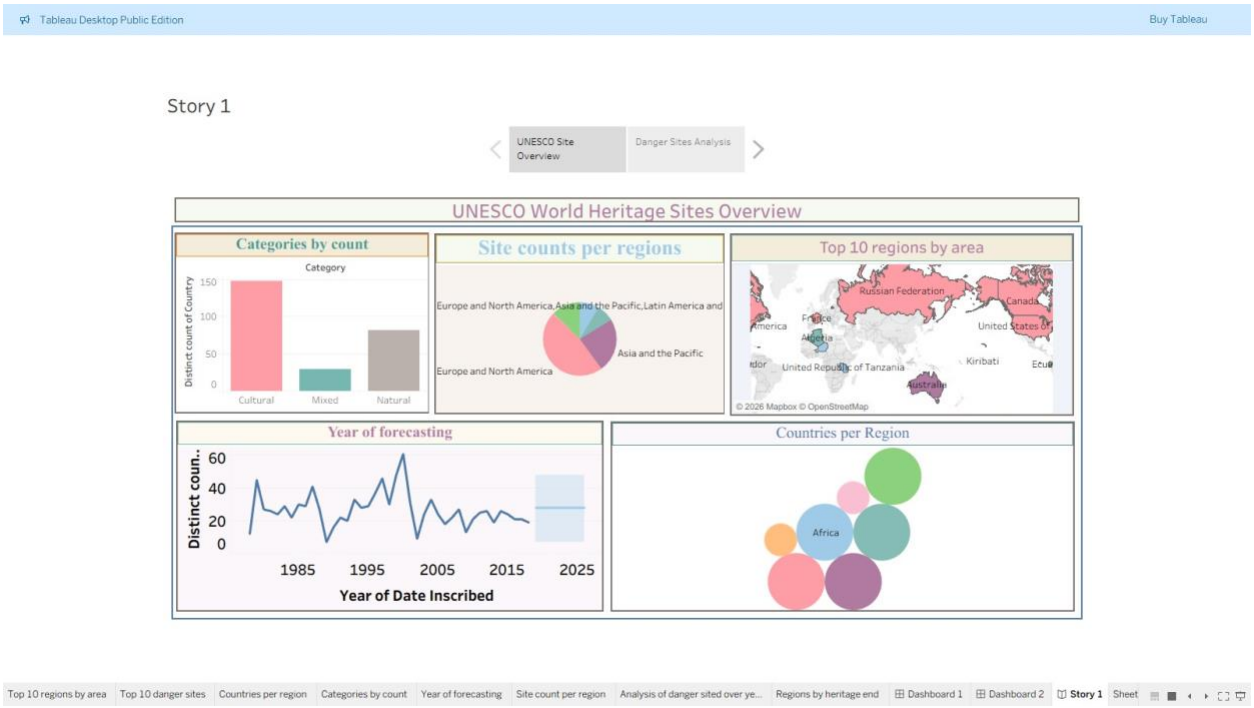
Tableau Desktop Public Edition
Buy Tableau
Story 1
UNESCO Site Overview
Danger Sites Analysis
UNESCO World Heritage Sites Overview
Categories by count
Category
Distinct count of Country
Cultural
Mixed
Natural
Site counts per regions
Europe and North America, Asia and the Pacific, Latin America and
Asia and the Pacific
Europe and North America
Top 10 regions by area
Russian Federation
Canada
France
United States of
Kiribati
United Republic of Tanzania
© 2026 Mapbox © OpenStreetMap
Year of forecasting
Distinct coun..
Year of Date Inscribed
Countries per Region
Africa
Top 10 regions by area
Top 10 danger sites
Countries per region
Categories by count
Year of forecasting
Site count per region
Analysis of danger sited over ye...
Regions by heritage end
Dashboard 1
Dashboard 2
Story 1
Sheet

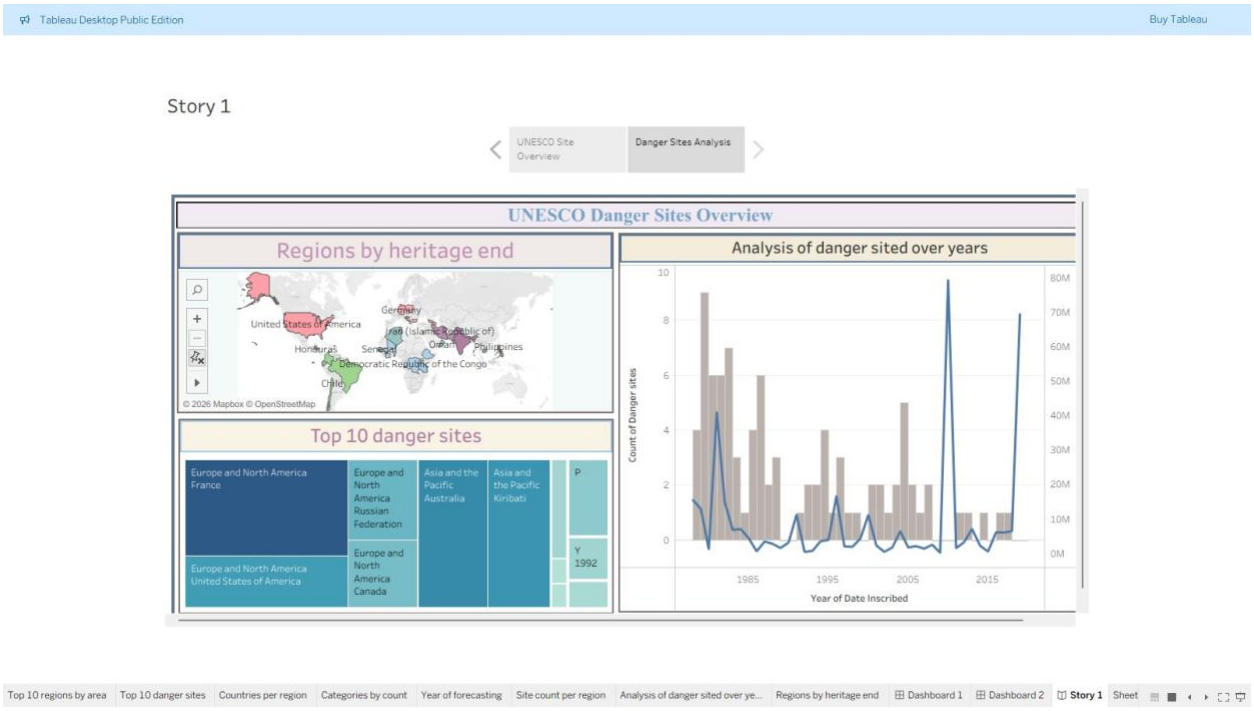
Tableau Desktop Public Edition
Buy Tableau
Story 1
UNESCO Site Overview
Danger Sites Analysis
UNESCO Danger Sites Overview
Regions by heritage end
United States of America
Honduras
Senegal
Oman
Philippines
Chile
© 2026 Mapbox © OpenStreetMap
Top 10 danger sites
Europe and North America France
Europe and North America Russian Federation
Asia and the Pacific Australia
Asia and the Pacific Kiribati
Europe and North America United States of America
Europe and North America Canada
Analysis of danger sited over years
Count of Danger sites
Year of Date Inscribed
Top 10 regions by area
Top 10 danger sites
Countries per region
Categories by count
Year of forecasting
Site count per region
Analysis of danger sited over ye...
Regions by heritage end
Dashboard 1
Dashboard 2
Story 1
Sheet

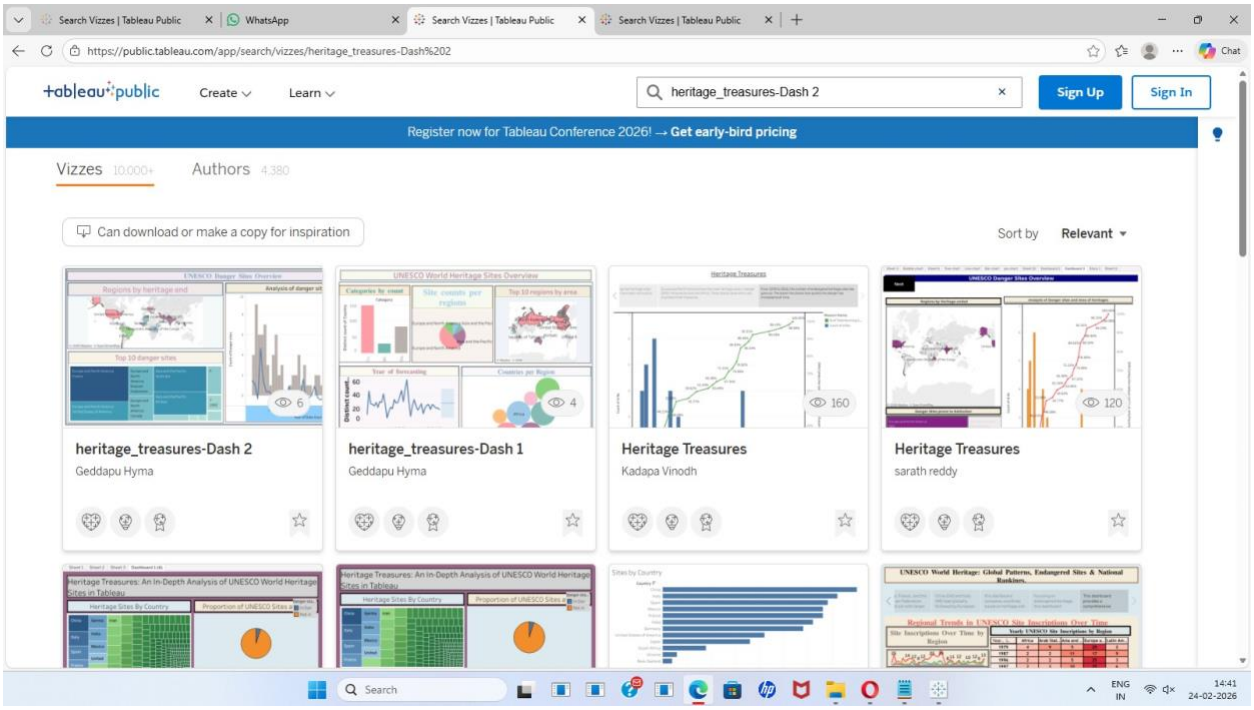
Search Vizzes | Tableau Public
WhatsApp
https://public.tableau.com/app/search/vizzes/heritage_treasures-Dash%202
tableau public
Create
Learn
heritage_treasures-Dash 2
Sign Up
Sign In
Register now for Tableau Conference 2026! → Get early-bird pricing
Vizzes 10,000+
Authors 4,380
Can download or make a copy for inspiration
Sort by Relevant
heritage_treasures-Dash 2
Geddapu Hyma
heritage_treasures-Dash 1
Geddapu Hyma
Heritage Treasures
Kadapa Vinodh
Heritage Treasures
sarath reddy

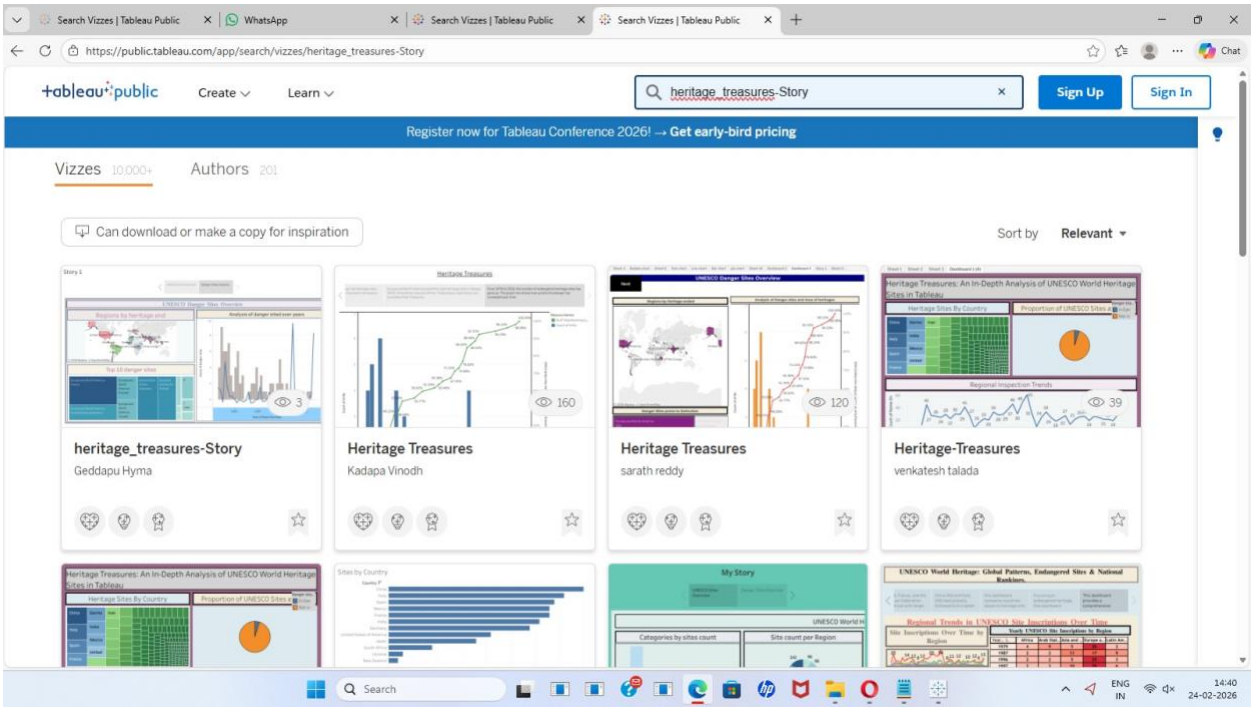
Search Vizzes | Tableau Public
WhatsApp
https://public.tableau.com/app/search/vizzes/heritage_treasures-Story
tableau public
Create
Learn
heritage_treasures-Story
Sign Up
Sign In
Register now for Tableau Conference 2026! → Get early-bird pricing
Vizzes 10,000+
Authors 201
Can download or make a copy for inspiration
Sort by Relevant
heritage_treasures-Story
Geddapu Hyma
Heritage Treasures
Kadapa Vinodh
Heritage Treasures
sarath reddy
Heritage-Treasures
venkatesh talada

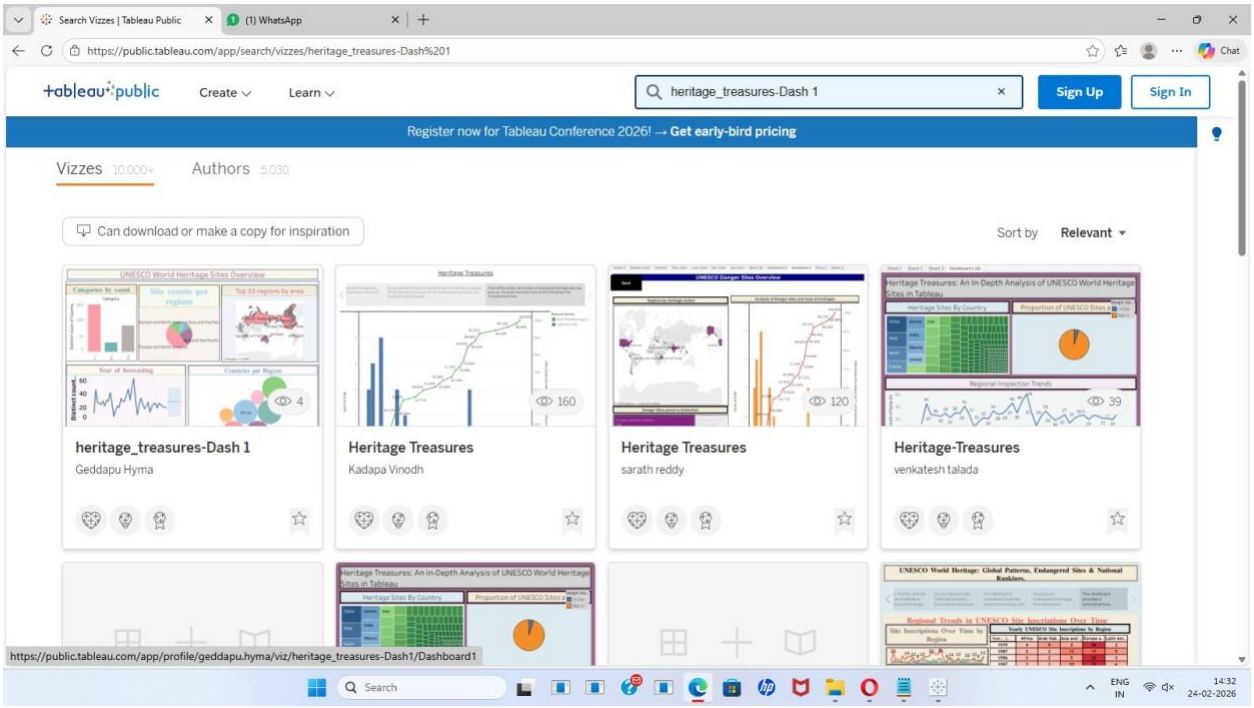
Search Vizzes | Tableau Public
(1) WhatsApp
https://public.tableau.com/app/search/vizzes/heritage_treasures-Dash%201
tableau public
Create
Learn
heritage_treasures-Dash 1
Sign Up
Sign In
Register now for Tableau Conference 2026! → Get early-bird pricing
Vizzes 10,000+
Authors 5,030
Can download or make a copy for inspiration
Sort by Relevant
heritage_treasures-Dash 1
Geddapu Hyma
Heritage Treasures
Kadapa Vinodh
Heritage Treasures
sarath reddy
Heritage-Treasures
venkatesh talada
https://public.tableau.com/app/profile/geddapu.hyma/viz/heritage_treasures-Dash1/Dashboard1

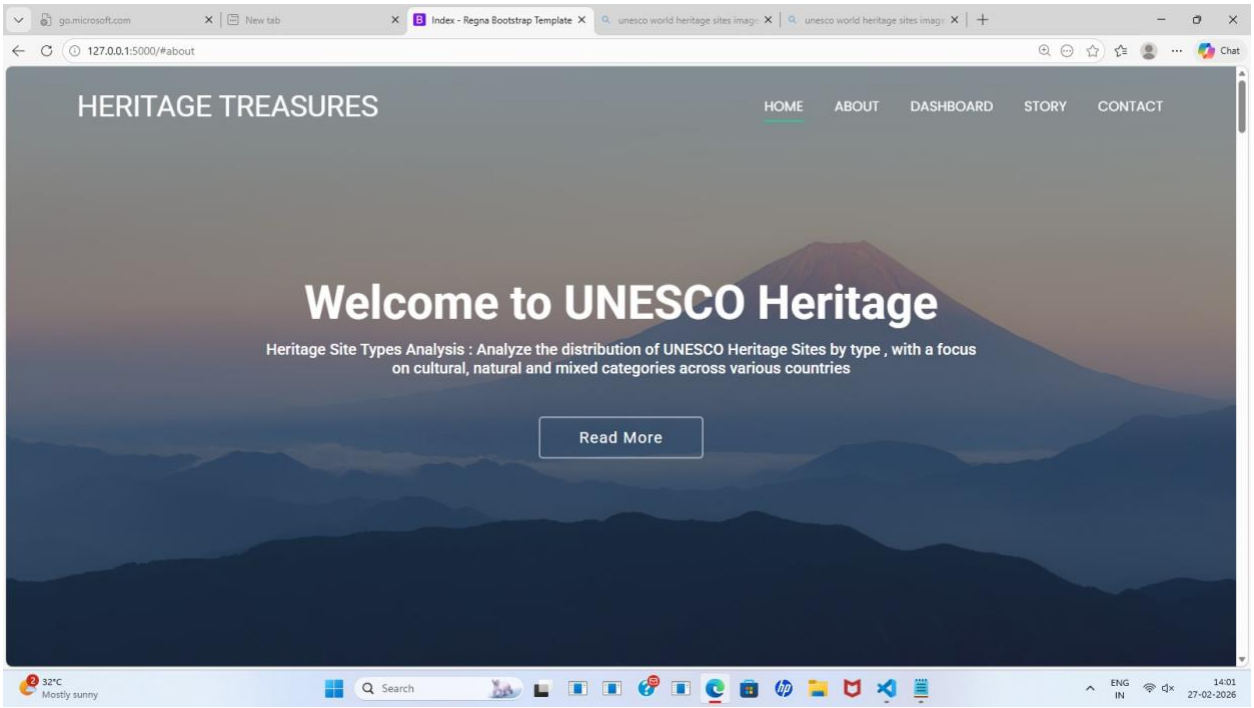
Index - Regna Bootstrap Template
127.0.0.1:5000/#about
HERITAGE TREASURES
HOME
ABOUT
DASHBOARD
STORY
CONTACT
Welcome to UNESCO Heritage
Heritage Site Types Analysis : Analyze the distribution of UNESCO Heritage Sites by type , with a focus on cultural, natural and mixed categories across various countries
Read More

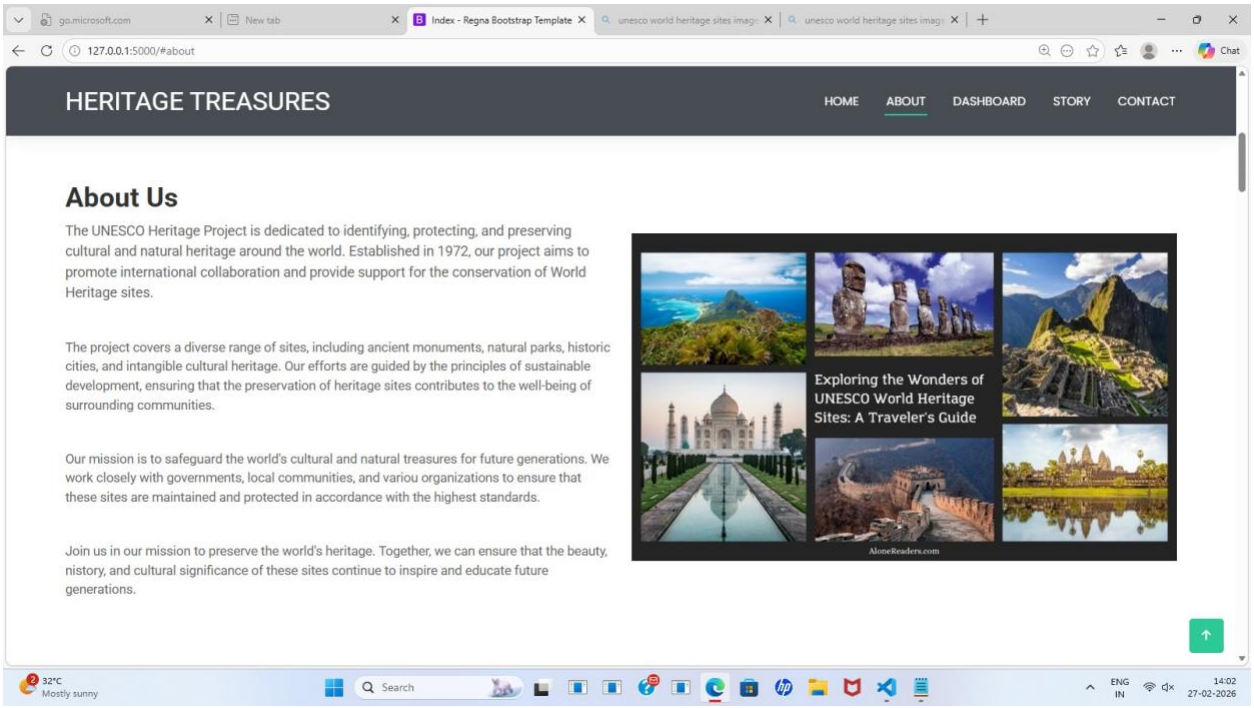
Index - Regna Bootstrap Template
127.0.0.1:5000/#about
HERITAGE TREASURES
HOME
ABOUT
DASHBOARD
STORY
CONTACT
About Us
The UNESCO Heritage Project is dedicated to identifying, protecting, and preserving cultural and natural heritage around the world. Established in 1972, our project aims to promote international collaboration and provide support for the conservation of World Heritage sites.
The project covers a diverse range of sites, including ancient monuments, natural parks, historic cities, and intangible cultural heritage. Our efforts are guided by the principles of sustainable development, ensuring that the preservation of heritage sites contributes to the well-being of surrounding communities.
Our mission is to safeguard the world's cultural and natural treasures for future generations. We work closely with governments, local communities, and variou organizations to ensure that these sites are maintained and protected in accordance with the highest standards.
Join us in our mission to preserve the world's heritage. Together, we can ensure that the beauty, nistory, and cultural significance of these sites continue to inspire and educate future generations.
Exploring the Wonders of UNESCO World Heritage Sites: A Traveler's Guide
AloneReaders.com

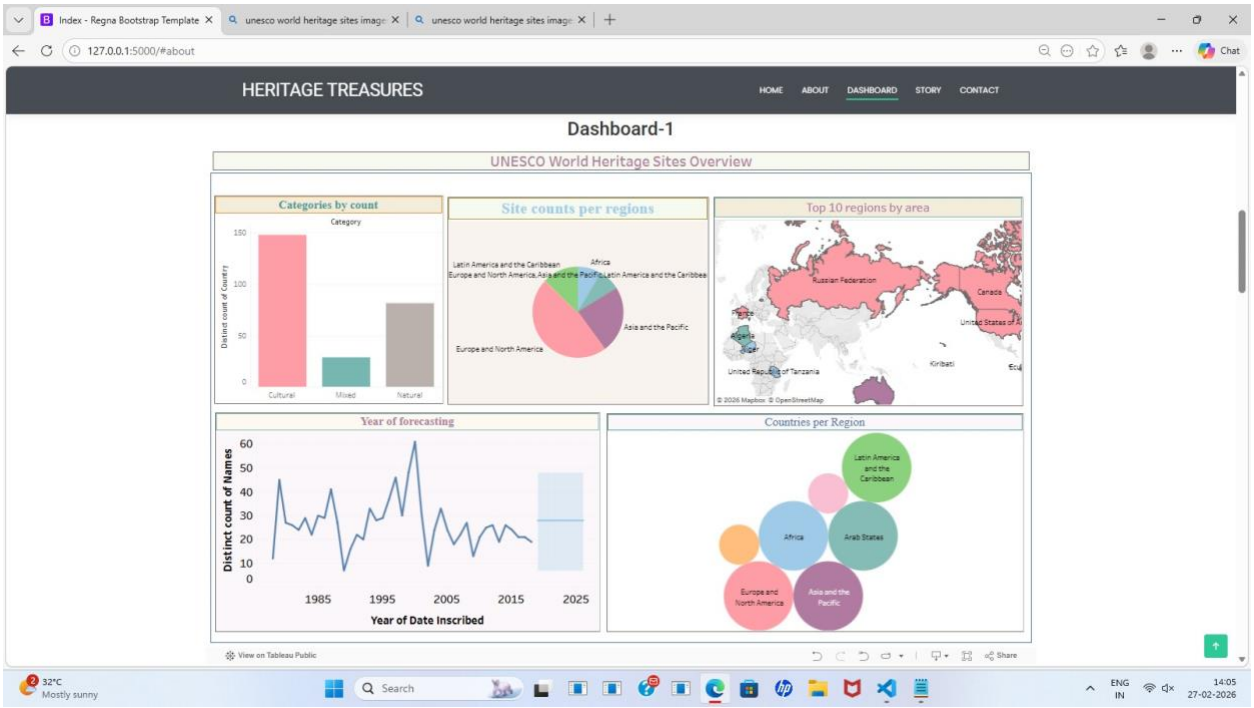
Index - Regna Bootstrap Template
unesco world heritage sites image
127.0.0.1:5000/#about
HERITAGE TREASURES
HOME
ABOUT
DASHBOARD
STORY
CONTACT
Dashboard-1
UNESCO World Heritage Sites Overview
Categories by count
Category
Distinct count of Country
Cultural
Mixed
Natural
Site counts per regions
Latin America and the Caribbean
Africa
Europe and North America
Asia and the Pacific
Top 10 regions by area
Russian Federation
Canada
Kiribati
Year of forecasting
Distinct count of Names
Year of Date Inscribed
Countries per Region
Latin America and the Caribbean
Africa
Arab States
Europe and North America
Asia and the Pacific
View on Tableau Public
Share
32°C
Mostly sunny
Search
ENG
IN
14:05
27-02-2026

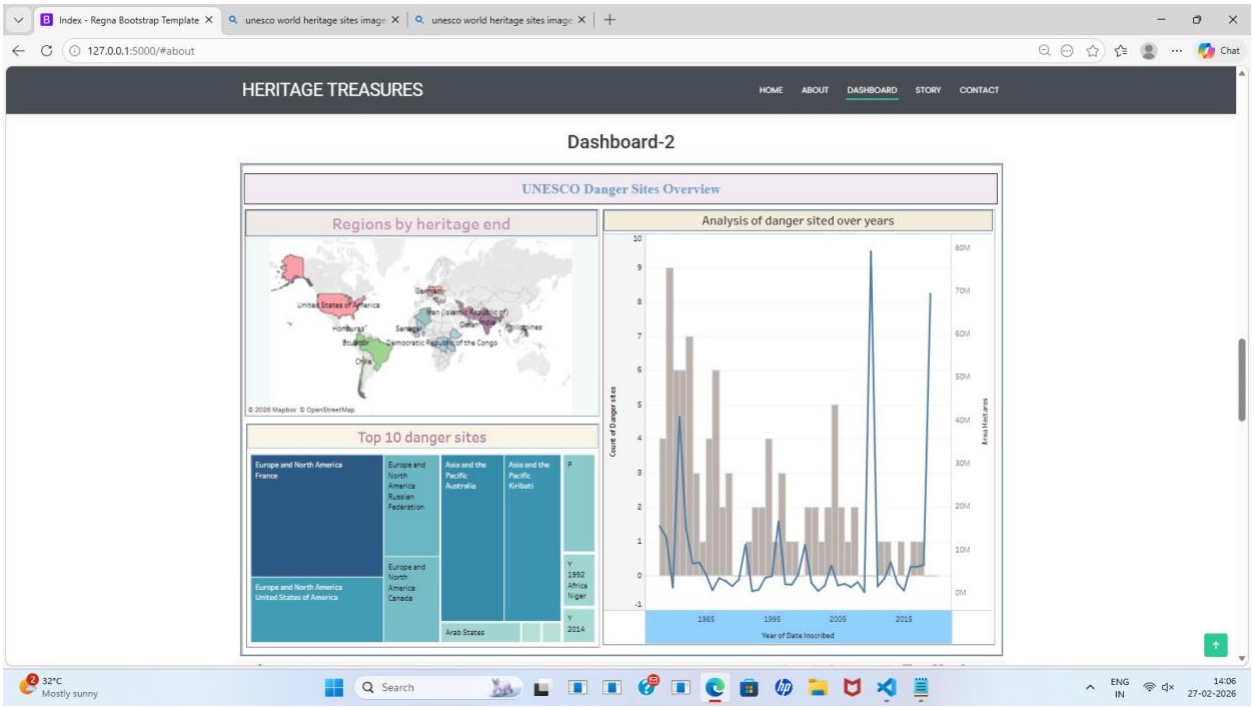
Index - Regna Bootstrap Template
unesco world heritage sites image
127.0.0.1:5000/#about
HERITAGE TREASURES
HOME
ABOUT
DASHBOARD
STORY
CONTACT
Dashboard-2
UNESCO Danger Sites Overview
Regions by heritage end
Analysis of danger sited over years
Count of Danger sites
Area Hectares
Year of Date Inscribed
Top 10 danger sites
Europe and North America
France
Europe and North America
United States of America
Europe and North America
Russian Federation
Europe and North America
Canada
Asia and the Pacific
Australia
Asia and the Pacific
Kiribati
Arab States
32°C
Mostly sunny
Search
ENG
IN
14:06
27-02-2026

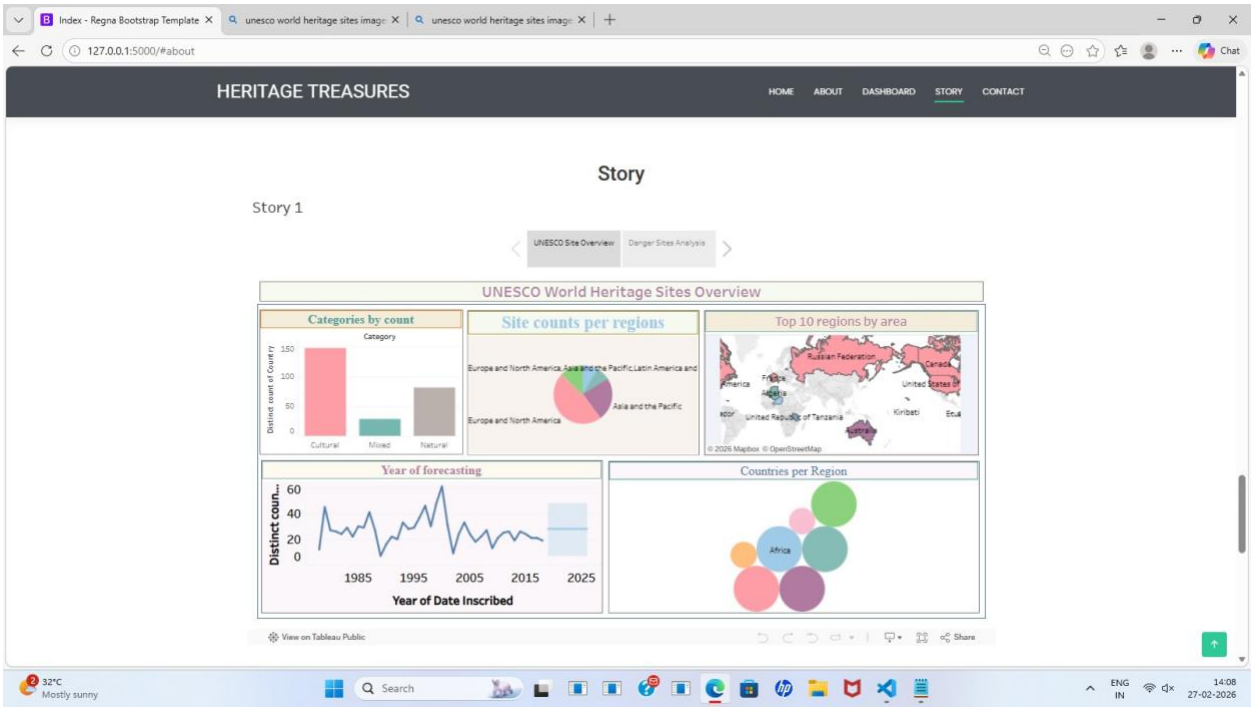
Index - Regna Bootstrap Template
unesco world heritage sites image
127.0.0.1:5000/#about
HERITAGE TREASURES
HOME
ABOUT
DASHBOARD
STORY
CONTACT
Story
Story 1
UNESCO Site Overview
Danger Sites Analysis
UNESCO World Heritage Sites Overview
Categories by count
Category
Distinct count of Country
Cultural
Mixed
Natural
Site counts per regions
Europe and North America
Asia and the Pacific
Latin America and
Top 10 regions by area
Russian Federation
Canada
United States
Kiribati
United Republic of Tanzania
© 2026 Mapbox © OpenStreetMap
Year of forecasting
Distinct coun...
Year of Date Inscribed
Countries per Region
Africa
View on Tableau Public
Share
32°C
Mostly sunny
Search
ENG
IN
14:08
27-02-2026

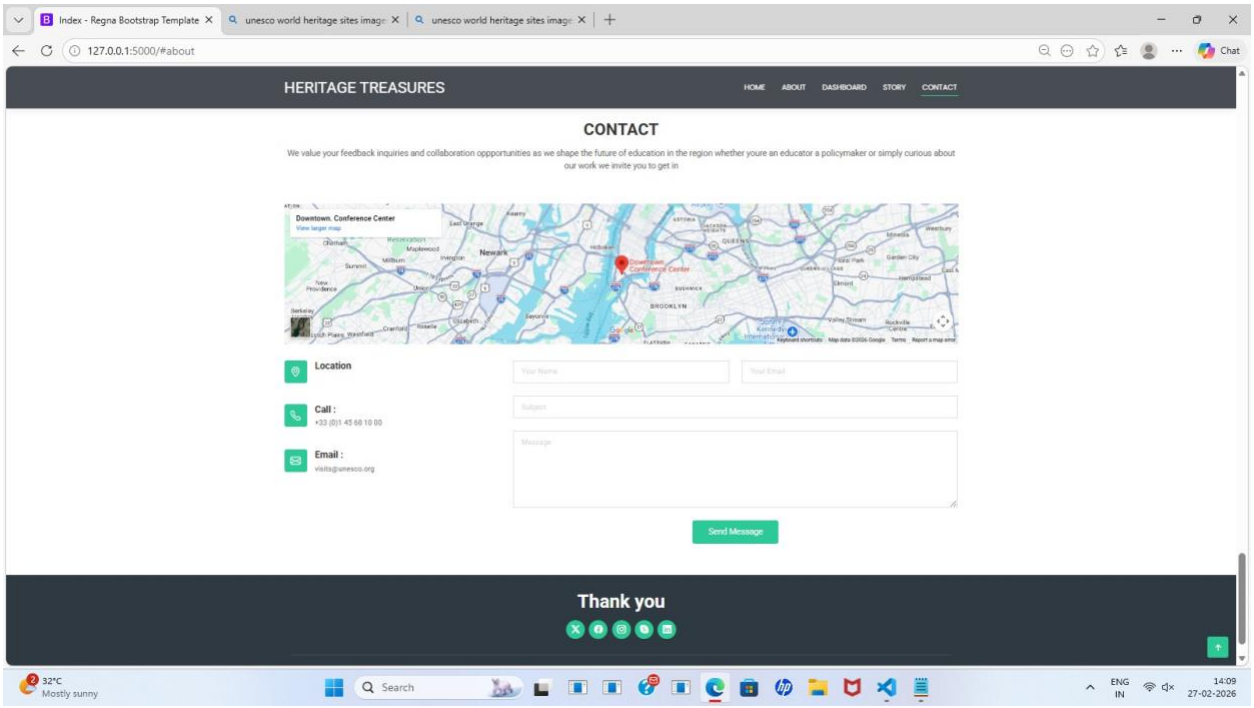
Index - Regna Bootstrap Template
unesco world heritage sites image
127.0.0.1:5000/#about
HERITAGE TREASURES
HOME
ABOUT
DASHBOARD
STORY
CONTACT
CONTACT
We value your feedback inquiries and collaboration oppportunities as we shape the future of education in the region whether youre an educator a policymaker or simply curious about our work we invite you to get in
Downtown. Conference Center
View larger map
Newark
BROOKLYN
Location
Call :
+33 (0)1 45 68 10 00
Email :
visits@unesco.org
Send Message
Thank you
32°C
Mostly sunny
Search
ENG
IN
14:09
27-02-2026

8. Advantages and disadvantages of the project

Advantages :

- Provides clear visual representation of complex global data
- Helps in understanding historical and geographical trends
- Interactive dashboards improve user engagement
- Supports decision-making in tourism and heritage conservation
- Enhances data analysis and Tableau skills

Disadvantages :

- Depends on the accuracy and completeness of the dataset
- Limited to available attributes in the dataset
- Does not include real-time updates
- Advanced predictive analysis is not included

9. Conclusion

The Heritage Treasures project successfully demonstrates how data visualization can transform global heritage data into meaningful insights. By using Tableau, the project presents an organized and interactive analysis of UNESCO World Heritage Sites, highlighting trends, regional distributions, and site categories.

Overall, the project emphasizes the importance of heritage conservation while showcasing the practical application of data analytics and visualization techniques in understanding global cultural and natural assets.